Hours of Service Report — Richard Ivan Woods ☆

DATE (CDT)	SHIFT	DRIVING	FROM	TO
Wed, Apr 30	11:01:08	10:16:55	2.8 mi N Wauseon, OH	12.3 mi NE Council Bluffs, IA

Carrier Name: Xross Integrated Transport
Carrier Address: 218 E Bedford St, Dimmitt TX 79027
Carrier US DOT Number: 2195271

ELD Provider & ID: Samsara (82K7)

Driver: Richard Ivan Woods (RichardI)
App: Signed into v.2530.200.15543
Driver License: TX 13779825
Ruleset: USA Property (8/70)
Vehicles: 1022
Home Terminal Name: Xross Integrated Transport
Home Terminal Address: 218 E Bedford St, Dimmitt TX 79027

Shipping ID: Empty, 307052780 pipe, 108139 stone veneer
Trailer Name: LB26
Distance: 641 mi

Richard Ivan Woods — Wed, Apr 30

Certified on 05/01/2025 at 5:42 AM

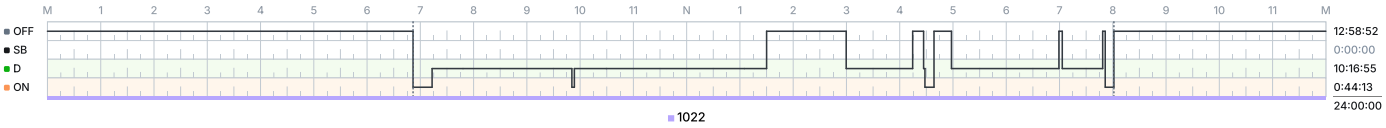

Time	Duration	Status	Remark	Vehicle	Odometer	Location
12:00:00 AM CDT - 6:51:49 AM CDT	6h 51m	OFF DUTY		1022	68,670 mi	2.8 mi N Wauseon, OH
6:51:49 AM CDT - 7:13:15 AM CDT	21m 26s	ON DUTY		1022	68,670 mi	2.8 mi N Wauseon, OH
7:13:15 AM CDT - 7:48:05 AM CDT	34m 49s	DRIVING(ELD)		1022	68,670 mi	2.9 mi N Wauseon, OH
7:48:05 AM CDT - 9:50:42 AM CDT	2h 2m	DRIVING(ELD)		1022	68,705 mi	9.9 mi E Angola, IN
9:50:42 AM CDT - 9:53:31 AM CDT	2m 48s	ON DUTY		1022	68,824 mi	3.5 mi NNW Westville, IN

Time	Duration	Status	Remark	Vehicle	Odometer	Location
9:53:31 AM CDT - 10:29:24 AM CDT	35m 52s	DRIVING(ELD)		1022	68,824 mi	3.4 mi NNW Westville, IN
10:29:24 AM CDT - 1:04:59 PM CDT	2h 35m	DRIVING(ELD)		1022	68,856 mi	1.1 mi NE Lansing, IL
1:04:59 PM CDT - 1:30:03 PM CDT	25m 3s	DRIVING(ELD)		1022	69,017 mi	5.4 mi NNE Silvis, IL
1:30:03 PM CDT - 2:59:43 PM CDT	1h 29m	OFF DUTY		1022	69,040 mi	10.5 mi WSW Eldridge, IA
2:59:43 PM CDT - 4:14:35 PM CDT	1h 14m	DRIVING(ELD)		1022	69,040 mi	10.5 mi WSW Eldridge, IA
4:14:35 PM CDT - 4:26:54 PM CDT	12m 19s	OFF DUTY		1022	69,123 mi	19.0 mi E Grinnell, IA
4:26:54 PM CDT - 4:28:24 PM CDT	1m 29s	DRIVING(ELD)		1022	69,123 mi	19.0 mi E Grinnell, IA
4:28:24 PM CDT - 4:38:37 PM CDT	10m 13s	ON DUTY	Fuel	1022	69,123 mi	19.0 mi E Grinnell, IA
4:38:37 PM CDT - 4:58:17 PM CDT	19m 40s	OFF DUTY		1022	69,123 mi	19.0 mi E Grinnell, IA
4:58:17 PM CDT - 6:59:19 PM CDT	2h 1m	DRIVING(ELD)		1022	69,123 mi	19.0 mi E Grinnell, IA
6:59:19 PM CDT - 7:03:06 PM CDT	3m 47s	OFF DUTY		1022	69,259 mi	9.9 mi NE Atlantic, IA
7:03:06 PM CDT - 7:48:37 PM CDT	45m 30s	DRIVING(ELD)		1022	69,259 mi	9.9 mi NE Atlantic, IA
7:48:37 PM CDT - 7:51:29 PM CDT	2m 52s	OFF DUTY		1022	69,305 mi	12.3 mi NE Council Bluffs, IA
7:51:29 PM CDT - 8:01:15 PM CDT	9m 46s	ON DUTY		1022	69,305 mi	12.3 mi NE Council Bluffs, IA
8:01:15 PM CDT - 12:00:00 AM CDT	3h 58m	OFF DUTY		1022	69,305 mi	12.3 mi NE Council Bluffs, IA

Tue, Apr 29	10:36:49	9:42:16	5.7 mi NE Kutztown, PA	2.8 mi N Wauseon, OH

Carrier Name: Xross Integrated Transport
Carrier Address: 218 E Bedford St, Dimmitt TX 79027
Carrier US DOT Number: 2195271

ELD Provider & ID: Samsara (82K7)

Driver: Richard Ivan Woods (RichardI)
App: Signed into v.2530.200.15543
Driver License: TX 13779825
Ruleset: USA Property (8/70)
Vehicles: 1022
Home Terminal Name: Xross Integrated Transport
Home Terminal Address: 218 E Bedford St, Dimmitt TX 79027

Shipping ID: Empty, 307052780 pipe, 108139 stone veneer
Trailer Name: LB26
Distance: 540 mi

Richard Ivan Woods — Tue, Apr 29

Certified on 04/29/2025 at 9:26 PM

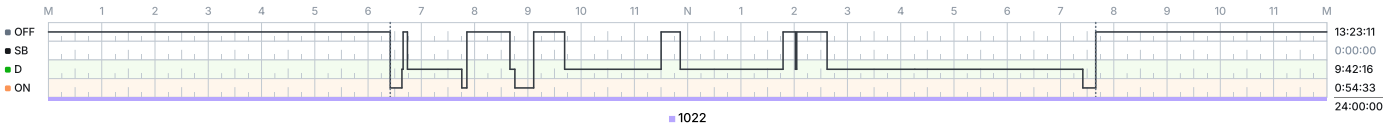

Time	Duration	Status	Remark	Vehicle	Odometer	Location
12:00:00 AM CDT - 6:25:00 AM CDT	6h 25m	OFF DUTY		1022	68,135 mi	5.7 mi NE Kutztown, PA
6:25:00 AM CDT - 6:38:09 AM CDT	13m 9s	ON DUTY		1022	68,135 mi	5.7 mi NE Kutztown, PA
6:38:09 AM CDT - 6:39:29 AM CDT	1m 19s	DRIVING(ELD)		1022	68,135 mi	5.7 mi NE Kutztown, PA
6:39:29 AM CDT - 6:44:21 AM CDT	4m 52s	OFF DUTY		1022	68,135 mi	5.7 mi NE Kutztown, PA
6:44:21 AM CDT - 7:45:36 AM CDT	1h 1m	DRIVING(ELD)		1022	68,135 mi	5.7 mi NE Kutztown, PA
7:45:36 AM CDT - 7:51:19 AM CDT	5m 42s	ON DUTY		1022	68,164 mi	5.6 mi E Schuylkill Haven, PA
7:51:19 AM CDT - 8:39:50 AM CDT	48m 31s	OFF DUTY		1022	68,164 mi	5.6 mi E Schuylkill Haven, PA
8:39:50 AM CDT - 8:45:24 AM CDT	5m 34s	DRIVING(ELD)		1022	68,164 mi	5.6 mi E Schuylkill Haven, PA
8:45:24 AM CDT - 9:06:35 AM CDT	21m 10s	ON DUTY		1022	68,164 mi	5.5 mi E Schuylkill Haven, PA

Time	Duration	Status	Remark	Vehicle	Odometer	Location
9:06:35 AM CDT - 9:41:25 AM CDT	34m 50s	OFF DUTY		1022	68,164 mi	5.5 mi E Schuylkill Haven, PA
9:41:25 AM CDT - 11:30:07 AM CDT	1h 48m	DRIVING(ELD)		1022	68,164 mi	5.5 mi E Schuylkill Haven, PA
11:30:07 AM CDT - 11:51:39 AM CDT	21m 32s	OFF DUTY		1022	68,250 mi	6.5 mi ESE Milton, PA
11:51:39 AM CDT - 1:47:28 PM CDT	1h 55m	DRIVING(ELD)		1022	68,250 mi	6.5 mi ESE Milton, PA
1:47:28 PM CDT - 2:01:21 PM CDT	13m 53s	OFF DUTY		1022	68,373 mi	1.9 mi NW DuBois, PA
2:01:21 PM CDT - 2:02:52 PM CDT	1m 30s	DRIVING(ELD)		1022	68,373 mi	1.9 mi NW DuBois, PA
2:02:52 PM CDT - 2:37:04 PM CDT	34m 12s	OFF DUTY		1022	68,373 mi	2.0 mi NW DuBois, PA
2:37:04 PM CDT - 4:15:55 PM CDT	1h 38m	DRIVING(ELD)		1022	68,373 mi	1.9 mi NW DuBois, PA
4:15:55 PM CDT - 7:25:09 PM CDT	3h 9m	DRIVING(ELD)		1022	68,469 mi	2.3 mi SSW Farrell, PA
7:25:09 PM CDT - 7:39:39 PM CDT	14m 30s	ON DUTY		1022	68,670 mi	2.8 mi N Wauseon, OH
7:39:39 PM CDT - 12:00:00 AM CDT	4h 20m	OFF DUTY		1022	68,670 mi	2.8 mi N Wauseon, OH

Mon, Apr 28	2:38:30	1:55:59	9.2 mi NNE Lebanon, PA	5.7 mi NE Kutztown, PA

Carrier Name: Xross Integrated Transport
Carrier Address: 218 E Bedford St, Dimmitt TX 79027
Carrier US DOT Number: 2195271

ELD Provider & ID: Samsara (82K7)

Driver: Richard Ivan Woods (RichardI)
App: Signed into v.2530.200.15543
Driver License: TX 13779825
Ruleset: USA Property (8/70)
Vehicles: 1022
Home Terminal Name: Xross Integrated Transport
Home Terminal Address: 218 E Bedford St, Dimmitt TX 79027

Shipping ID: Empty, 307052780 pipe
Trailer Name: LB26
Distance: 74 mi

Richard Ivan Woods — Mon, Apr 28

Certified on 04/29/2025 at 6:24 AM

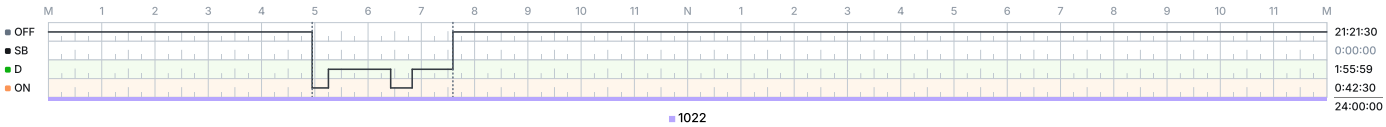

Time	Duration	Status	Remark	Vehicle	Odometer	Location
12:00:00 AM CDT - 4:57:04 AM CDT	4h 57m	OFF DUTY		1022	68,061 mi	9.2 mi NNE Lebanon, PA
4:57:04 AM CDT - 5:15:21 AM CDT	18m 17s	ON DUTY		1022	68,061 mi	9.2 mi NNE Lebanon, PA
5:15:21 AM CDT - 6:25:29 AM CDT	1h 10m	DRIVING(ELD)		1022	68,061 mi	9.2 mi NNE Lebanon, PA
6:25:29 AM CDT - 6:49:42 AM CDT	24m 13s	ON DUTY		1022	68,117 mi	1.3 mi ENE Fullerton, PA
6:49:42 AM CDT - 7:35:34 AM CDT	45m 51s	DRIVING(ELD)		1022	68,117 mi	1.3 mi ENE Fullerton, PA
7:35:34 AM CDT - 12:00:00 AM CDT	16h 24m	OFF DUTY		1022	68,134 mi	5.7 mi NE Kutztown, PA

Sun, Apr 27	0:00:00	0:00:00	9.2 mi NNE Lebanon, PA	9.2 mi NNE Lebanon, PA

Carrier Name: Xross Integrated Transport
Carrier Address: 218 E Bedford St, Dimmitt TX 79027
Carrier US DOT Number: 2195271

ELD Provider & ID: Samsara (82K7)

Driver: Richard Ivan Woods (RichardI)
App: Signed into v.2530.200.15543
Driver License: TX 13779825
Ruleset: USA Property (8/70)
Vehicles: 1022
Home Terminal Name: Xross Integrated Transport
Home Terminal Address: 218 E Bedford St, Dimmitt TX 79027

Shipping ID: Empty, 307052780 pipe
Trailer Name: LB26
Distance: - mi

Richard Ivan Woods — Sun, Apr 27

Certified on 04/27/2025 at 9:17 PM

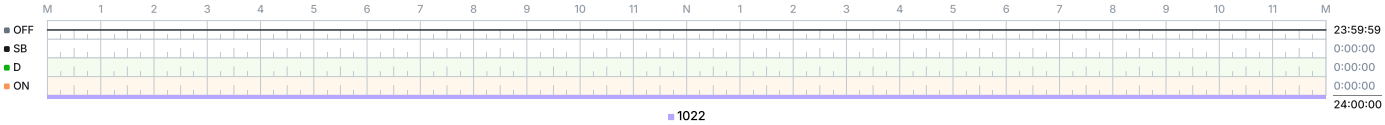

Time	Duration	Status	Remark	Vehicle	Odometer	Location
12:00:00 AM CDT - 12:00:00 AM CDT	24h	OFF DUTY		1022	-	9.2 mi NNE Lebanon, PA

Sat, Apr 26	7:22:20	6:04:53	7.8 mi E Wytheville, VA	9.2 mi NNE Lebanon, PA

Carrier Name: Xross Integrated Transport
Carrier Address: 218 E Bedford St, Dimmitt TX 79027
Carrier US DOT Number: 2195271

ELD Provider & ID: Samsara (82K7)

Driver: Richard Ivan Woods (RichardI)
App: Signed into v.2530.200.15543
Driver License: TX 13779825
Ruleset: USA Property (8/70)
Vehicles: 1022
Home Terminal Name: Xross Integrated Transport
Home Terminal Address: 218 E Bedford St, Dimmitt TX 79027

Shipping ID: Empty, 307052780 pipe
Trailer Name: LB26
Distance: 382 mi

Richard Ivan Woods — Sat, Apr 26

Certified on 04/27/2025 at 4:10 PM

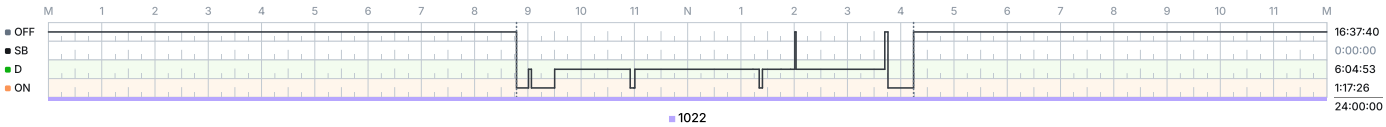

Time	Duration	Status	Remark	Vehicle	Odometer	Location
12:00:00 AM CDT - 8:47:14 AM CDT	8h 47m	OFF DUTY		1022	67,685 mi	7.8 mi E Wytheville, VA
8:47:14 AM CDT - 9:00:46 AM CDT	13m 32s	ON DUTY		1022	67,685 mi	7.8 mi E Wytheville, VA
9:00:46 AM CDT - 9:04:00 AM CDT	3m 13s	DRIVING(ELD)		1022	67,685 mi	7.7 mi E Wytheville, VA
9:04:00 AM CDT - 9:30:11 AM CDT	26m 11s	ON DUTY	Fuel	1022	67,685 mi	7.7 mi E Wytheville, VA
9:30:11 AM CDT - 10:55:17 AM CDT	1h 25m	DRIVING(ELD)		1022	67,685 mi	7.7 mi E Wytheville, VA
10:55:17 AM CDT - 10:59:22 AM CDT	4m 4s	ON DUTY		1022	67,772 mi	17.1 mi NNW Bedford, VA
10:59:22 AM CDT - 11:00:32 AM CDT	1m 10s	ON DUTY		1022	67,772 mi	17.1 mi NNW Bedford, VA
11:00:32 AM CDT - 1:13:35 PM CDT	2h 13m	DRIVING(ELD)		1022	67,772 mi	17.1 mi NNW Bedford, VA
1:13:35 PM CDT - 1:20:36 PM CDT	7m	DRIVING(ELD)		1022	67,926 mi	8.8 mi NNE Winchester, VA

Time	Duration	Status	Remark	Vehicle	Odometer	Location
1:20:36 PM CDT - 1:24:14 PM CDT	3m 38s	ON DUTY		1022	67,928 mi	10.5 mi NNE Winchester, VA
1:24:14 PM CDT - 1:45:13 PM CDT	20m 58s	DRIVING(ELD)		1022	67,928 mi	10.5 mi NNE Winchester, VA
1:45:13 PM CDT - 1:55:58 PM CDT	10m 44s	DRIVING(ELD)		1022	67,951 mi	4.5 mi WSW Halfway, MD
1:55:58 PM CDT - 2:00:45 PM CDT	4m 46s	DRIVING(ELD)		1022	67,963 mi	2.6 mi NNW Fountainhead-Orchard Hills, MD
2:00:45 PM CDT - 2:02:05 PM CDT	1m 20s	OFF DUTY		1022	67,966 mi	5.3 mi N Fountainhead-Orchard Hills, MD
2:02:05 PM CDT - 3:42:04 PM CDT	1h 39m	DRIVING(ELD)		1022	67,966 mi	5.4 mi N Fountainhead-Orchard Hills, MD
3:42:04 PM CDT - 3:45:39 PM CDT	3m 35s	OFF DUTY		1022	68,061 mi	9.2 mi NNE Lebanon, PA
3:45:39 PM CDT - 4:14:29 PM CDT	28m 50s	ON DUTY		1022	68,061 mi	9.2 mi NNE Lebanon, PA
4:14:29 PM CDT - 12:00:00 AM CDT	7h 45m	OFF DUTY		1022	68,061 mi	9.2 mi NNE Lebanon, PA

Fri, Apr 25	10:22:01	9:21:30	9.6 mi E Brownsville, TN	7.8 mi E Wytheville, VA

Carrier Name: Xross Integrated Transport
Carrier Address: 218 E Bedford St, Dimmitt TX 79027
Carrier US DOT Number: 2195271

ELD Provider & ID: Samsara (82K7)

Driver: Richard Ivan Woods (RichardI)
App: Signed into v.2530.200.15543
Driver License: TX 13779825
Ruleset: USA Property (8/70)
Vehicles: 1022
Home Terminal Name: Xross Integrated Transport
Home Terminal Address: 218 E Bedford St, Dimmitt TX 79027

Shipping ID: Empty, 307052780 pipe
Trailer Name: LB26
Distance: 552 mi

Richard Ivan Woods — Fri, Apr 25

Certified on 04/25/2025 at 9:12 PM

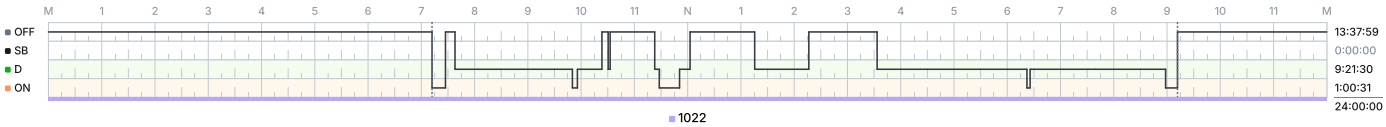

Time	Duration	Status	Remark	Vehicle	Odometer	Location
12:00:00 AM CDT - 7:12:04 AM CDT	7h 12m	OFF DUTY		1022	67,139 mi	9.6 mi E Brownsville, TN
7:12:04 AM CDT - 7:27:11 AM CDT	15m 7s	ON DUTY		1022	67,139 mi	9.6 mi E Brownsville, TN
7:27:11 AM CDT - 7:37:56 AM CDT	10m 45s	OFF DUTY		1022	67,139 mi	9.6 mi E Brownsville, TN
7:37:56 AM CDT - 9:50:11 AM CDT	2h 12m	DRIVING(ELD)		1022	67,139 mi	9.6 mi E Brownsville, TN
9:50:11 AM CDT - 9:55:48 AM CDT	5m 37s	ON DUTY		1022	67,284 mi	9.6 mi SE Franklin, TN
9:55:48 AM CDT - 10:23:26 AM CDT	27m 37s	DRIVING(ELD)		1022	67,284 mi	9.6 mi SE Franklin, TN
10:23:26 AM CDT - 10:30:28 AM CDT	7m 2s	OFF DUTY		1022	67,311 mi	3.9 mi S Murfreesboro, TN
10:30:28 AM CDT - 10:32:42 AM CDT	2m 13s	DRIVING(ELD)		1022	67,311 mi	3.9 mi S Murfreesboro, TN
10:32:42 AM CDT - 11:22:54 AM CDT	50m 12s	OFF DUTY		1022	67,311 mi	3.9 mi S Murfreesboro, TN

Time	Duration	Status	Remark	Vehicle	Odometer	Location
11:22:54 AM CDT - 11:28:03 AM CDT	5m 8s	DRIVING(ELD)		1022	67,311 mi	3.9 mi S Murfreesboro, TN
11:28:03 AM CDT - 11:50:52 AM CDT	22m 48s	ON DUTY		1022	67,311 mi	3.9 mi S Murfreesboro, TN
11:50:52 AM CDT - 12:02:44 PM CDT	11m 51s	DRIVING(ELD)		1022	67,311 mi	3.9 mi S Murfreesboro, TN
12:02:44 PM CDT - 1:15:30 PM CDT	1h 12m	OFF DUTY		1022	67,316 mi	2.6 mi S Murfreesboro, TN
1:15:30 PM CDT - 2:16:29 PM CDT	1h	DRIVING(ELD)		1022	67,316 mi	2.6 mi S Murfreesboro, TN
2:16:29 PM CDT - 3:33:25 PM CDT	1h 16m	OFF DUTY		1022	67,369 mi	19.1 mi E Lebanon, TN
3:33:25 PM CDT - 6:22:11 PM CDT	2h 48m	DRIVING(ELD)		1022	67,369 mi	19.1 mi E Lebanon, TN
6:22:11 PM CDT - 6:25:44 PM CDT	3m 33s	ON DUTY		1022	67,521 mi	8.3 mi SSW Jefferson City, TN
6:25:44 PM CDT - 7:39:38 PM CDT	1h 13m	DRIVING(ELD)		1022	67,521 mi	8.3 mi SSW Jefferson City, TN
7:39:38 PM CDT - 8:58:22 PM CDT	1h 18m	DRIVING(ELD)		1022	67,605 mi	3.0 mi W Bristol, TN
8:58:22 PM CDT - 9:11:46 PM CDT	13m 24s	ON DUTY		1022	67,685 mi	7.8 mi E Wytheville, VA
9:11:46 PM CDT - 12:00:00 AM CDT	2h 48m	OFF DUTY		1022	67,685 mi	7.8 mi E Wytheville, VA

Thu, Apr 24	10:30:40	9:44:41	6.2 mi W Lawton, OK	9.6 mi E Brownsville, TN

Carrier Name: Xross Integrated Transport
Carrier Address: 218 E Bedford St, Dimmitt TX 79027
Carrier US DOT Number: 2195271

ELD Provider & ID: Samsara (82K7)

Driver: Richard Ivan Woods (RichardI)
App: Signed into v.2530.200.15543
Driver License: TX 13779825
Ruleset: USA Property (8/70)
Vehicles: 1022
Home Terminal Name: Xross Integrated Transport
Home Terminal Address: 218 E Bedford St, Dimmitt TX 79027

Shipping ID: Empty, 307052780 pipe
Trailer Name: LB22, LB26
Distance: 624 mi

Richard Ivan Woods — Thu, Apr 24

Certified on 04/24/2025 at 9:42 PM

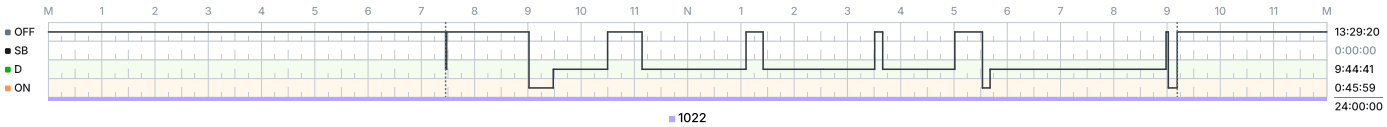

Time	Duration	Status	Remark	Vehicle	Odometer	Location
12:00:00 AM CDT - 7:27:22 AM CDT	7h 27m	OFF DUTY		1022	66,522 mi	6.2 mi W Lawton, OK
7:27:22 AM CDT - 7:28:32 AM CDT	1m 9s	DRIVING(ELD)		1022	66,522 mi	6.2 mi W Lawton, OK
7:28:32 AM CDT - 9:01:17 AM CDT	1h 32m	OFF DUTY		1022	66,522 mi	6.2 mi W Lawton, OK
9:01:17 AM CDT - 9:28:36 AM CDT	27m 19s	ON DUTY		1022	66,522 mi	6.2 mi W Lawton, OK
9:28:36 AM CDT - 10:29:49 AM CDT	1h 1m	DRIVING(ELD)		1022	66,523 mi	6.2 mi W Lawton, OK
10:29:49 AM CDT - 11:08:39 AM CDT	38m 50s	OFF DUTY		1022	66,578 mi	3.4 mi NE Chickasha, OK
11:08:39 AM CDT - 1:05:46 PM CDT	1h 57m	DRIVING(ELD)		1022	66,578 mi	3.4 mi NE Chickasha, OK
1:05:46 PM CDT - 1:25:01 PM CDT	19m 15s	OFF DUTY		1022	66,709 mi	11.0 mi E Henryetta, OK
1:25:01 PM CDT - 2:32:45 PM CDT	1h 7m	DRIVING(ELD)		1022	66,709 mi	11.0 mi E Henryetta, OK

Time	Duration	Status	Remark	Vehicle	Odometer	Location
2:32:45 PM CDT - 3:30:42 PM CDT	57m 56s	DRIVING(ELD)		1022	66,788 mi	5.1 mi NNW Fort Smith, AR
3:30:42 PM CDT - 3:39:42 PM CDT	9m	OFF DUTY		1022	66,855 mi	9.8 mi SE Clarksville, AR
3:39:42 PM CDT - 5:00:58 PM CDT	1h 21m	DRIVING(ELD)		1022	66,855 mi	9.8 mi SE Clarksville, AR
5:00:58 PM CDT - 5:01:10 PM CDT	12s	OFF DUTY	Fuel	1022	66,947 mi	5.9 mi S Jacksonville, AR
5:01:10 PM CDT - 5:32:04 PM CDT	30m 54s	OFF DUTY		1022	66,947 mi	5.9 mi S Jacksonville, AR
5:32:04 PM CDT - 5:40:39 PM CDT	8m 35s	ON DUTY	Fuel	1022	66,947 mi	6.0 mi S Jacksonville, AR
5:40:39 PM CDT - 7:44:09 PM CDT	2h 3m	DRIVING(ELD)		1022	66,947 mi	6.0 mi S Jacksonville, AR
7:44:09 PM CDT - 8:58:53 PM CDT	1h 14m	DRIVING(ELD)		1022	67,070 mi	1.1 mi WNW Memphis, TN
8:58:53 PM CDT - 9:01:25 PM CDT	2m 32s	OFF DUTY		1022	67,139 mi	9.6 mi E Brownsville, TN
9:01:25 PM CDT - 9:11:30 PM CDT	10m 5s	ON DUTY		1022	67,139 mi	9.6 mi E Brownsville, TN
9:11:30 PM CDT - 12:00:00 AM CDT	2h 48m	OFF DUTY		1022	67,139 mi	9.6 mi E Brownsville, TN

Wed, Apr 23	5:02:54	4:53:28	1.7 mi ENE Dalhart, TX	6.2 mi W Lawton, OK

Carrier Name: Xross Integrated Transport
Carrier Address: 218 E Bedford St, Dimmitt TX 79027
Carrier US DOT Number: 2195271

ELD Provider & ID: Samsara (82K7)

Driver: Richard Ivan Woods (RichardI)
App: Signed into v.2530.200.15543
Driver License: TX 13779825
Ruleset: USA Property (8/70)
Vehicles: 1022
Home Terminal Name: Xross Integrated Transport
Home Terminal Address: 218 E Bedford St, Dimmitt TX 79027

Shipping ID: Empty
Trailer Name: LB22
Distance: 298 mi

Richard Ivan Woods — Wed, Apr 23

Certified on 04/24/2025 at 6:59 AM

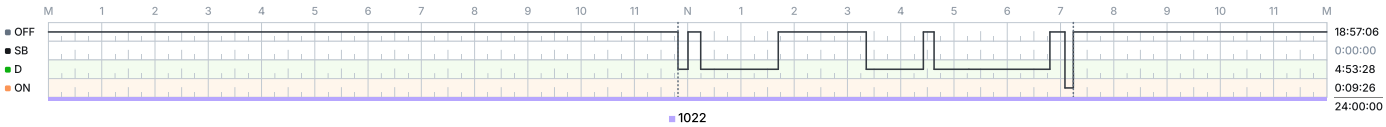

Time	Duration	Status	Remark	Vehicle	Odometer	Location
12:00:00 AM CDT - 11:49:07 AM CDT	11h 49m	OFF DUTY		1022	66,229 mi	1.7 mi ENE Dalhart, TX Dalhart shop
11:49:07 AM CDT - 12:00:24 PM CDT	11m 16s	DRIVING(ELD)		1022	66,229 mi	1.7 mi ENE Dalhart, TX Dalhart shop
12:00:24 PM CDT - 12:14:42 PM CDT	14m 18s	OFF DUTY		1022	66,232 mi	0.4 mi SE Dalhart, TX Toot n Tootum Dalhart,
12:14:42 PM CDT - 1:42:04 PM CDT	1h 27m	DRIVING(ELD)		1022	66,232 mi	0.5 mi SE Dalhart, TX Toot n Tootum Dalhart,
1:42:04 PM CDT - 3:21:10 PM CDT	1h 39m	OFF DUTY		1022	66,323 mi	4.6 mi ESE Amarillo, TX Amarillo
3:21:10 PM CDT - 4:25:30 PM CDT	1h 4m	DRIVING(ELD)		1022	66,323 mi	4.6 mi ESE Amarillo, TX Amarillo
4:25:30 PM CDT - 4:37:34 PM CDT	12m 4s	OFF DUTY		1022	66,394 mi	36.5 mi NW Childress, TX General Ag Exempt Area
4:37:34 PM CDT - 5:16:49 PM CDT	39m 15s	DRIVING(ELD)		1022	66,394 mi	36.5 mi NW Childress, TX General Ag Exempt Area
5:16:49 PM CDT - 6:48:03 PM CDT	1h 31m	DRIVING(ELD)		1022	66,435 mi	21.2 mi NNE Childress, TX General Ag Exempt Area

Time	Duration	Status	Remark	Vehicle	Odometer	Location
6:48:03 PM CDT - 7:05:00 PM CDT	16m 57s	OFF DUTY		1022	66,522 mi	6.3 mi W Lawton, OK
7:05:00 PM CDT - 7:14:26 PM CDT	9m 26s	ON DUTY		1022	66,522 mi	6.2 mi W Lawton, OK
7:14:26 PM CDT - 12:00:00 AM CDT	4h 45m	OFF DUTY		1022	66,522 mi	6.2 mi W Lawton, OK

Tue, Apr 22	7:35:15	3:47:22	15.1 mi ESE Plainview, TX	1.7 mi ENE Dalhart, TX

Carrier Name: Xross Integrated Transport
Carrier Address: 218 E Bedford St, Dimmitt TX 79027
Carrier US DOT Number: 2195271

ELD Provider & ID: Samsara (82K7)

Driver: Richard Ivan Woods (RichardI)
App: Signed into v.2530.200.15543
Driver License: TX 13779825
Ruleset: USA Property (8/70)
Vehicles: 1022
Home Terminal Name: Xross Integrated Transport
Home Terminal Address: 218 E Bedford St, Dimmitt TX 79027

Shipping ID: Empty
Trailer Name: LB22
Distance: 195 mi

Richard Ivan Woods — Tue, Apr 22

Certified on 04/22/2025 at 7:51 PM

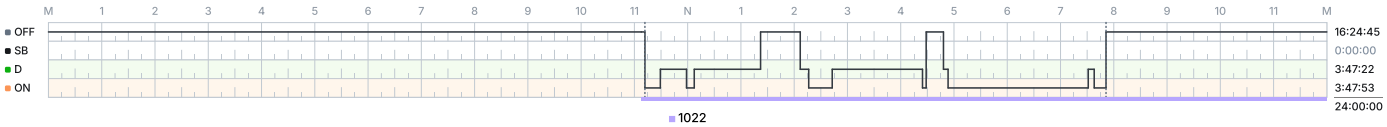

Time	Duration	Status	Remark	Vehicle	Odometer	Location
12:00:00 AM CDT - 11:07:46 AM CDT	11h 7m	OFF DUTY		-	-	15.1 mi ESE Plainview, TX General Ag Exempt Area
11:07:46 AM CDT - 11:11:51 AM CDT	4m 4s	OFF DUTY		1022	66,036 mi	15.2 mi ESE Plainview, TX General Ag Exempt Area
11:11:51 AM CDT - 11:29:14 AM CDT	17m 23s	ON DUTY		1022	66,036 mi	15.2 mi ESE Plainview, TX General Ag Exempt Area
11:29:14 AM CDT - 11:58:43 AM CDT	29m 28s	DRIVING(ELD)		1022	66,036 mi	15.1 mi ESE Plainview, TX General Ag Exempt Area
11:58:43 AM CDT - 12:07:25 PM CDT	8m 42s	ON DUTY		1022	66,053 mi	2.4 mi W Plainview, TX General Ag Exempt Area
12:07:25 PM CDT - 1:22:08 PM CDT	1h 14m	DRIVING(ELD)		1022	66,053 mi	2.4 mi W Plainview, TX General Ag Exempt Area
1:22:08 PM CDT - 2:06:49 PM CDT	44m 41s	OFF DUTY	Wash	1022	66,134 mi	5.6 mi ESE Amarillo, TX Blue Beacon, Amarillo TX, I-40 Exit 75
2:06:49 PM CDT - 2:16:22 PM CDT	9m 33s	DRIVING(ELD)		1022	66,134 mi	5.5 mi ESE Amarillo, TX Blue Beacon, Amarillo TX, I-40 Exit 75
2:16:22 PM CDT - 2:42:50 PM CDT	26m 28s	ON DUTY		1022	66,134 mi	5.4 mi ESE Amarillo, TX Amarillo

Time	Duration	Status	Remark	Vehicle	Odometer	Location
2:42:50 PM CDT - 4:24:32 PM CDT	1h 41m	DRIVING(ELD)		1022	66,134 mi	5.4 mi ESE Amarillo, TX Amarillo
4:24:32 PM CDT - 4:28:40 PM CDT	4m 7s	ON DUTY		1022	66,228 mi	1.7 mi ENE Dalhart, TX Dalhart shop
4:28:40 PM CDT - 4:48:09 PM CDT	19m 29s	OFF DUTY		1022	66,228 mi	1.7 mi ENE Dalhart, TX No parking Zone Dalhart Shop
4:48:09 PM CDT - 4:53:21 PM CDT	5m 12s	DRIVING(ELD)		1022	66,228 mi	1.7 mi ENE Dalhart, TX DBFW12.8
4:53:21 PM CDT - 7:31:14 PM CDT	2h 37m	ON DUTY		1022	66,228 mi	1.7 mi ENE Dalhart, TX Dalhart shop
7:31:14 PM CDT - 7:37:57 PM CDT	6m 42s	DRIVING(ELD)		1022	66,228 mi	1.7 mi ENE Dalhart, TX Dalhart shop
7:37:57 PM CDT - 7:51:16 PM CDT	13m 18s	ON DUTY		1022	66,228 mi	1.6 mi ENE Dalhart, TX Dalhart shop
7:51:16 PM CDT - 12:00:00 AM CDT	4h 8m	OFF DUTY		1022	66,229 mi	1.7 mi ENE Dalhart, TX No parking Zone Dalhart Shop

Mon, Apr 21	0:00:00	0:00:00	15.1 mi ESE Plainview, TX	15.1 mi ESE Plainview, TX

Carrier Name: Xross Integrated Transport
Carrier Address: 218 E Bedford St, Dimmitt TX 79027
Carrier US DOT Number: 2195271

ELD Provider & ID: Samsara (82K7)

Driver: Richard Ivan Woods (RichardI)
App: Signed into v.2530.200.15543
Driver License: TX 13779825
Ruleset: USA Property (8/70)
Vehicles: -
Home Terminal Name: Xross Integrated Transport
Home Terminal Address: 218 E Bedford St, Dimmitt TX 79027

Shipping ID:
Trailer Name:
Distance: - mi

Richard Ivan Woods — Mon, Apr 21

Certified on 04/22/2025 at 11:07 AM

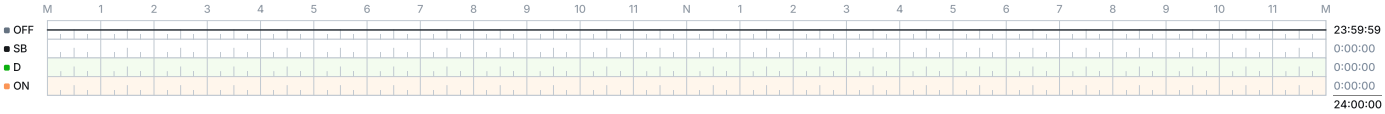

Time	Duration	Status	Remark	Vehicle	Odometer	Location
12:00:00 AM CDT - 12:00:00 AM CDT	24h	OFF DUTY		-	-	15.1 mi ESE Plainview, TX General Ag Exempt Area

Sun, Apr 20	0:00:00	0:00:00	15.1 mi ESE Plainview, TX	15.1 mi ESE Plainview, TX

Carrier Name: Xross Integrated Transport
Carrier Address: 218 E Bedford St, Dimmitt TX 79027
Carrier US DOT Number: 2195271

ELD Provider & ID: Samsara (82K7)

Driver: Richard Ivan Woods (RichardI)
App: Signed into v.2530.200.15543
Driver License: TX 13779825
Ruleset: USA Property (8/70)
Vehicles: -
Home Terminal Name: Xross Integrated Transport
Home Terminal Address: 218 E Bedford St, Dimmitt TX 79027

Shipping ID:
Trailer Name:
Distance: - mi

Richard Ivan Woods — Sun, Apr 20

Certified on 04/22/2025 at 11:07 AM

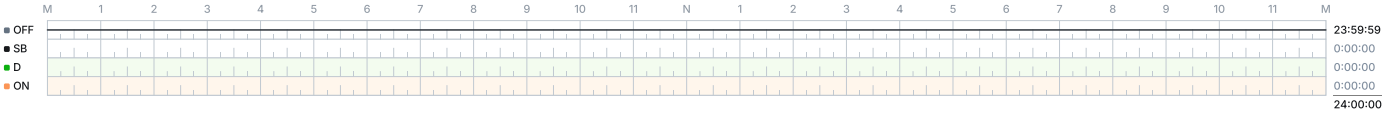

Time	Duration	Status	Remark	Vehicle	Odometer	Location
12:00:00 AM CDT - 12:00:00 AM CDT	24h	OFF DUTY		-	-	15.1 mi ESE Plainview, TX General Ag Exempt Area

Sat, Apr 19	0:00:00	0:00:00	15.1 mi ESE Plainview, TX	15.1 mi ESE Plainview, TX

Carrier Name: Xross Integrated Transport
Carrier Address: 218 E Bedford St, Dimmitt TX 79027
Carrier US DOT Number: 2195271

ELD Provider & ID: Samsara (82K7)

Driver: Richard Ivan Woods (RichardI)
App: Signed into v.2530.200.15543
Driver License: TX 13779825
Ruleset: USA Property (8/70)
Vehicles: -
Home Terminal Name: Xross Integrated Transport
Home Terminal Address: 218 E Bedford St, Dimmitt TX 79027

Shipping ID:
Trailer Name:
Distance: - mi

Richard Ivan Woods — Sat, Apr 19

Certified on 04/22/2025 at 11:07 AM

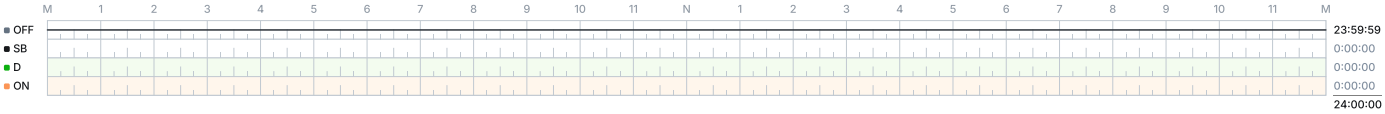

Time	Duration	Status	Remark	Vehicle	Odometer	Location
12:00:00 AM CDT - 12:00:00 AM CDT	24h	OFF DUTY		-	-	15.1 mi ESE Plainview, TX General Ag Exempt Area

Fri, Apr 18	5:20:30	5:05:37	20.7 mi WSW Gallup, NM	15.1 mi ESE Plainview, TX

Carrier Name: Xross Integrated Transport
Carrier Address: 218 E Bedford St, Dimmitt TX 79027
Carrier US DOT Number: 2195271

ELD Provider & ID: Samsara (82K7)

Driver: Richard Ivan Woods (RichardI)
App: Signed into v.2530.200.15543
Driver License: TX 13779825
Ruleset: USA Property (8/70)
Vehicles: 1022
Home Terminal Name: Xross Integrated Transport
Home Terminal Address: 218 E Bedford St, Dimmitt TX 79027

Shipping ID: 1277955609/ A/C units, Empty
Trailer Name: LB22
Distance: 426 mi

Richard Ivan Woods — Fri, Apr 18

Certified on 04/22/2025 at 11:07 AM

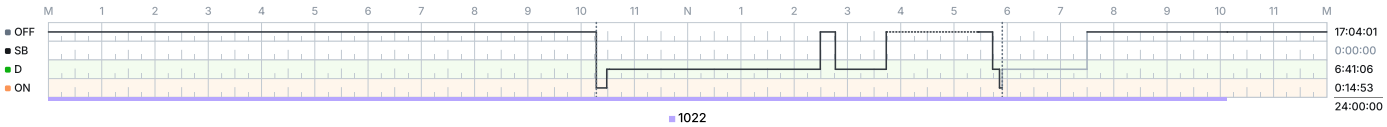

Time	Duration	Status	Remark	Vehicle	Odometer	Location
12:00:00 AM CDT - 10:17:08 AM CDT	10h 17m	OFF DUTY		1022	65,545 mi	20.7 mi WSW Gallup, NM
10:17:08 AM CDT - 10:28:52 AM CDT	11m 44s	ON DUTY		1022	65,545 mi	20.7 mi WSW Gallup, NM
10:28:52 AM CDT - 10:31:54 AM CDT	3m 2s	DRIVING(ELD)		1022	65,545 mi	20.7 mi WSW Gallup, NM
10:31:54 AM CDT - 2:29:25 PM CDT	3h 57m	DRIVING(ELD)		1022	65,545 mi	20.5 mi WSW Gallup, NM
2:29:25 PM CDT - 2:46:22 PM CDT	16m 57s	OFF DUTY		1022	65,820 mi	54.0 mi WSW Tucumcari, NM General Ag Exempt Area
2:46:22 PM CDT - 3:43:43 PM CDT	57m 20s	DRIVING(ELD)		1022	65,820 mi	54.0 mi WSW Tucumcari, NM General Ag Exempt Area
3:43:43 PM CDT - 3:44:10 PM CDT	27s	PERSONAL CONVEYANCE	Home	1022	65,876 mi	41.6 mi WNW Portales, NM General Ag Exempt Area
3:44:10 PM CDT - 5:27:11 PM CDT	1h 43m	PERSONAL CONVEYANCE	Home	1022	65,876 mi	41.2 mi WNW Portales, NM General Ag Exempt Area
5:27:11 PM CDT - 5:43:31 PM CDT	16m 19s	OFF DUTY		1022	65,945 mi	8.8 mi NW Muleshoe, TX General Ag Exempt Area

Time	Duration	Status	Remark	Vehicle	Odometer	Location
5:43:31 PM CDT - 5:51:15 PM CDT	7m 43s	DRIVING(ELD)		1022	65,945 mi	8.9 mi NW Muleshoe, TX General Ag Exempt Area
5:51:15 PM CDT - 5:54:24 PM CDT	3m 9s	ON DUTY		1022	65,945 mi	9.2 mi NW Muleshoe, TX General Ag Exempt Area
5:54:24 PM CDT - 7:29:53 PM CDT	1h 35m	DRIVING(ELD) Ignored (PC)	Truck Stop	1022	65,945 mi	9.2 mi NW Muleshoe, TX General Ag Exempt Area
7:29:53 PM CDT - 10:07:53 PM CDT	2h 37m	OFF DUTY	Break	1022	66,036 mi	15.1 mi ESE Plainview, TX General Ag Exempt Area
10:07:53 PM CDT - 10:07:59 PM CDT	6s	OFF DUTY		1022	66,036 mi	15.1 mi ESE Plainview, TX General Ag Exempt Area
10:07:59 PM CDT - 12:00:00 AM CDT	1h 52m	OFF DUTY		-	-	15.1 mi ESE Plainview, TX General Ag Exempt Area

Thu, Apr 17	10:16:05	9:52:05	20.2 mi SW Bullhead City, AZ	20.7 mi WSW Gallup, NM

Carrier Name: Xross Integrated Transport
Carrier Address: 218 E Bedford St, Dimmitt TX 79027
Carrier US DOT Number: 2195271

ELD Provider & ID: Samsara (82K7)

Driver: Richard Ivan Woods (RichardI)
App: Signed into v.2530.200.15543
Driver License: TX 13779825
Ruleset: USA Property (8/70)
Vehicles: 1022
Home Terminal Name: Xross Integrated Transport
Home Terminal Address: 218 E Bedford St, Dimmitt TX 79027

Shipping ID: 1277955609/ A/C units, Empty
Trailer Name: LB22
Distance: 560 mi

Richard Ivan Woods — Thu, Apr 17

Certified on 04/18/2025 at 8:24 AM

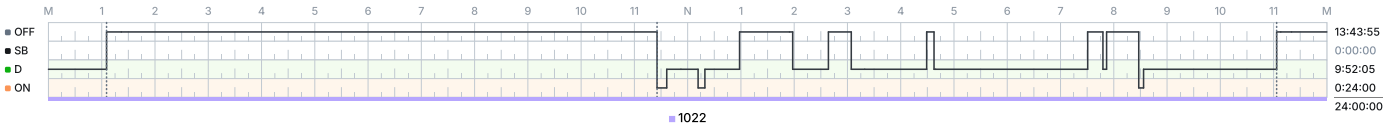

Time	Duration	Status	Remark	Vehicle	Odometer	Location
12:00:00 AM CDT - 1:05:26 AM CDT	1h 5m	DRIVING(ELD)		1022	64,992 mi	20.2 mi SW Bullhead City, AZ
1:05:26 AM CDT - 1:22:03 AM CDT	16m 37s	OFF DUTY	Misattributed Duty Status Time	1022	65,051 mi	25.0 mi SW Lake Havasu City, AZ
1:22:03 AM CDT - 11:25:32 AM CDT	10h 3m	OFF DUTY		1022	65,051 mi	25.0 mi SW Lake Havasu City, AZ
11:25:32 AM CDT - 11:36:27 AM CDT	10m 55s	ON DUTY		1022	65,051 mi	25.0 mi SW Lake Havasu City, AZ
11:36:27 AM CDT - 11:52:26 AM CDT	15m 59s	DRIVING(ELD)		1022	65,051 mi	24.9 mi SW Lake Havasu City, AZ
11:52:26 AM CDT - 12:11:46 PM CDT	19m 19s	DRIVING(ELD)		1022	65,066 mi	31.2 mi SSW Lake Havasu City, AZ
12:11:46 PM CDT - 12:19:25 PM CDT	7m 39s	ON DUTY		1022	65,077 mi	25.7 mi NNE Blythe, CA
12:19:25 PM CDT - 12:58:28 PM CDT	39m 2s	DRIVING(ELD)		1022	65,077 mi	25.7 mi NNE Blythe, CA
12:58:28 PM CDT - 1:54:44 PM CDT	56m 15s	OFF DUTY	Misattributed Duty Status Time	1022	65,091 mi	16.4 mi NNE Blythe, CA

Time	Duration	Status	Remark	Vehicle	Odometer	Location
1:54:44 PM CDT - 1:58:19 PM CDT	3m 35s	OFF DUTY		1022	65,091 mi	16.5 mi NNE Blythe, CA
1:58:19 PM CDT - 2:38:33 PM CDT	40m 13s	DRIVING(ELD)		1022	65,091 mi	16.5 mi NNE Blythe, CA
2:38:33 PM CDT - 3:04:18 PM CDT	25m 45s	OFF DUTY		1022	65,112 mi	25.7 mi NNE Blythe, CA
3:04:18 PM CDT - 3:19:28 PM CDT	15m 10s	DRIVING(ELD)		1022	65,112 mi	25.7 mi NNE Blythe, CA
3:19:28 PM CDT - 4:29:14 PM CDT	1h 9m	DRIVING(ELD)		1022	65,122 mi	31.2 mi SSW Lake Havasu City, AZ
4:29:14 PM CDT - 4:37:31 PM CDT	8m 17s	OFF DUTY		1022	65,187 mi	19.4 mi NNW Lake Havasu City, AZ
4:37:31 PM CDT - 4:39:19 PM CDT	1m 47s	DRIVING(ELD)		1022	65,187 mi	19.4 mi NNW Lake Havasu City, AZ
4:39:19 PM CDT - 7:30:37 PM CDT	2h 51m	DRIVING(ELD)		1022	65,188 mi	18.6 mi NNW Lake Havasu City, AZ
7:30:37 PM CDT - 7:47:47 PM CDT	17m 10s	OFF DUTY		1022	65,371 mi	10.1 mi WNW Flagstaff, AZ
7:47:47 PM CDT - 7:51:54 PM CDT	4m 6s	DRIVING(ELD)		1022	65,371 mi	10.1 mi WNW Flagstaff, AZ
7:51:54 PM CDT - 8:28:07 PM CDT	36m 13s	OFF DUTY		1022	65,372 mi	10.1 mi WNW Flagstaff, AZ
8:28:07 PM CDT - 8:33:33 PM CDT	5m 26s	ON DUTY	Fuel	1022	65,372 mi	10.1 mi WNW Flagstaff, AZ
8:33:33 PM CDT - 11:03:27 PM CDT	2h 29m	DRIVING(ELD)		1022	65,372 mi	10.1 mi WNW Flagstaff, AZ
11:03:27 PM CDT - 11:08:07 PM CDT	4m 40s	OFF DUTY		1022	65,545 mi	20.7 mi WSW Gallup, NM
11:08:07 PM CDT - 11:20:14 PM CDT	12m 7s	OFF DUTY	Misattributed Duty Status Time	1022	65,545 mi	20.7 mi WSW Gallup, NM
11:20:14 PM CDT - 12:00:00 AM CDT	39m 46s	OFF DUTY		1022	65,545 mi	20.7 mi WSW Gallup, NM

Wed, Apr 16	8:22:02	8:01:25	1.8 mi ENE Fernley, NV	20.2 mi SW Bullhead City, AZ

Carrier Name: Xross Integrated Transport
Carrier Address: 218 E Bedford St, Dimmitt TX 79027
Carrier US DOT Number: 2195271

ELD Provider & ID: Samsara (82K7)

Driver: Richard Ivan Woods (RichardI)
App: Signed into v.2530.200.15543
Driver License: TX 13779825
Ruleset: USA Property (8/70)
Vehicles: 1022
Home Terminal Name: Xross Integrated Transport
Home Terminal Address: 218 E Bedford St, Dimmitt TX 79027

Shipping ID: 1277955609/ A/C units, Empty
Trailer Name: LB22
Distance: 513 mi

Richard Ivan Woods — Wed, Apr 16

Certified on 04/17/2025 at 1:42 AM

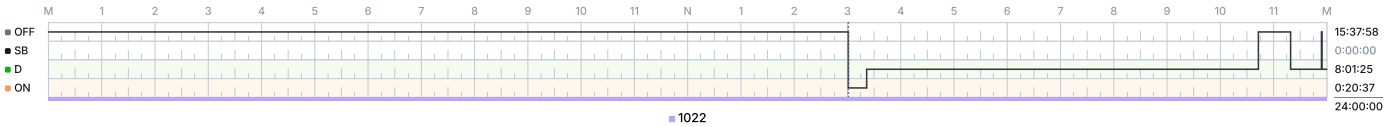

Time	Duration	Status	Remark	Vehicle	Odometer	Location
12:00:00 AM CDT - 3:01:02 PM CDT	15h 1m	OFF DUTY		1022	64,488 mi	1.8 mi ENE Fernley, NV
3:01:02 PM CDT - 3:21:39 PM CDT	20m 37s	ON DUTY		1022	64,488 mi	1.8 mi ENE Fernley, NV
3:21:39 PM CDT - 10:42:54 PM CDT	7h 21m	DRIVING(ELD)		1022	64,488 mi	1.8 mi ENE Fernley, NV
10:42:54 PM CDT - 11:19:11 PM CDT	36m 17s	OFF DUTY		1022	64,952 mi	28.0 mi NW Laughlin, NV
11:19:11 PM CDT - 11:37:06 PM CDT	17m 55s	DRIVING(ELD)		1022	64,952 mi	28.0 mi NW Laughlin, NV
11:37:06 PM CDT - 11:53:55 PM CDT	16m 48s	DRIVING(ELD)		1022	64,971 mi	15.6 mi W Laughlin, NV
11:53:55 PM CDT - 11:54:34 PM CDT	39s	OFF DUTY		1022	64,987 mi	20.2 mi SW Bullhead City, AZ
11:54:34 PM CDT - 12:00:00 AM CDT	5m 25s	DRIVING(ELD)		1022	64,987 mi	20.2 mi SW Bullhead City, AZ

Tue, Apr 15	6:46:32	5:39:13	26.9 mi SSE Yreka, CA	1.8 mi ENE Fernley, NV

Carrier Name: Xross Integrated Transport
Carrier Address: 218 E Bedford St, Dimmitt TX 79027
Carrier US DOT Number: 2195271

ELD Provider & ID: Samsara (82K7)

Driver: Richard Ivan Woods (RichardI)
App: Signed into v.2530.200.15543
Driver License: TX 13779825
Ruleset: USA Property (8/70)
Vehicles: 1022
Home Terminal Name: Xross Integrated Transport
Home Terminal Address: 218 E Bedford St, Dimmitt TX 79027

Shipping ID: 1277955609/ A/C units
Trailer Name: LB22
Distance: 268 mi

Richard Ivan Woods — Tue, Apr 15

Certified on 04/15/2025 at 9:46 AM

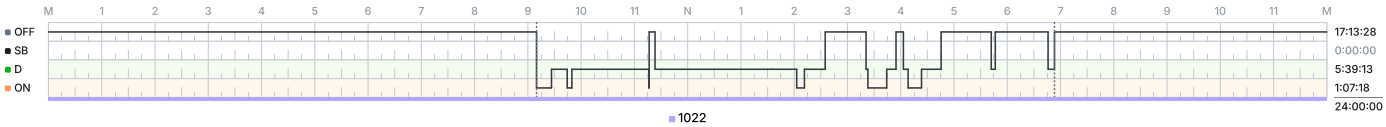

Time	Duration	Status	Remark	Vehicle	Odometer	Location
12:00:00 AM CDT - 9:09:47 AM CDT	9h 9m	OFF DUTY		1022	64,223 mi	26.9 mi SSE Yreka, CA
9:09:47 AM CDT - 9:26:38 AM CDT	16m 51s	ON DUTY		1022	64,223 mi	26.8 mi SSE Yreka, CA
9:26:38 AM CDT - 9:44:19 AM CDT	17m 41s	DRIVING(ELD)		1022	64,223 mi	26.8 mi SSE Yreka, CA
9:44:19 AM CDT - 9:49:35 AM CDT	5m 16s	ON DUTY		1022	64,233 mi	35.6 mi SSE Yreka, CA
9:49:35 AM CDT - 11:16:26 AM CDT	1h 26m	DRIVING(ELD)		1022	64,233 mi	35.6 mi SSE Yreka, CA
11:16:26 AM CDT - 11:16:39 AM CDT	13s	ON DUTY		1022	64,310 mi	44.4 mi WNW Susanville, CA
11:16:39 AM CDT - 11:23:15 AM CDT	6m 36s	OFF DUTY		1022	64,310 mi	44.4 mi WNW Susanville, CA
11:23:15 AM CDT - 1:34:20 PM CDT	2h 11m	DRIVING(ELD)		1022	64,310 mi	44.4 mi WNW Susanville, CA
1:34:20 PM CDT - 2:02:50 PM CDT	28m 30s	DRIVING(ELD)		1022	64,428 mi	1.4 mi WSW Cold Springs, NV

Time	Duration	Status	Remark	Vehicle	Odometer	Location
2:02:50 PM CDT - 2:11:31 PM CDT	8m 41s	ON DUTY		1022	64,450 mi	2.5 mi ESE Sparks, NV
2:11:31 PM CDT - 2:34:56 PM CDT	23m 24s	DRIVING(ELD)		1022	64,450 mi	2.5 mi ESE Sparks, NV
2:34:56 PM CDT - 3:20:58 PM CDT	46m 2s	OFF DUTY		1022	64,466 mi	13.3 mi WSW Fernley, NV
3:20:58 PM CDT - 3:23:01 PM CDT	2m 2s	DRIVING(ELD)		1022	64,466 mi	13.3 mi WSW Fernley, NV
3:23:01 PM CDT - 3:44:13 PM CDT	21m 12s	ON DUTY		1022	64,466 mi	13.4 mi WSW Fernley, NV
3:44:13 PM CDT - 3:54:42 PM CDT	10m 28s	DRIVING(ELD)		1022	64,466 mi	13.4 mi WSW Fernley, NV
3:54:42 PM CDT - 4:03:01 PM CDT	8m 19s	OFF DUTY		1022	64,469 mi	13.1 mi ESE Spanish Springs, NV
4:03:01 PM CDT - 4:08:21 PM CDT	5m 19s	DRIVING(ELD)		1022	64,469 mi	13.1 mi WSW Fernley, NV
4:08:21 PM CDT - 4:23:26 PM CDT	15m 5s	ON DUTY		1022	64,469 mi	13.1 mi ESE Spanish Springs, NV
4:23:26 PM CDT - 4:45:32 PM CDT	22m 5s	DRIVING(ELD)		1022	64,469 mi	13.1 mi ESE Spanish Springs, NV
4:45:32 PM CDT - 5:41:59 PM CDT	56m 27s	OFF DUTY		1022	64,487 mi	1.9 mi E Fernley, NV
5:41:59 PM CDT - 5:46:31 PM CDT	4m 31s	DRIVING(ELD)		1022	64,487 mi	1.9 mi E Fernley, NV
5:46:31 PM CDT - 6:46:00 PM CDT	59m 29s	OFF DUTY		1022	64,487 mi	1.7 mi E Fernley, NV
6:46:00 PM CDT - 6:53:12 PM CDT	7m 11s	DRIVING(ELD)		1022	64,487 mi	1.7 mi E Fernley, NV
6:53:12 PM CDT - 7:07:37 PM CDT	14m 25s	OFF DUTY	Misattributed Duty Status Time	1022	64,488 mi	1.8 mi ENE Fernley, NV
7:07:37 PM CDT - 12:00:00 AM CDT	4h 52m	OFF DUTY		1022	64,488 mi	1.8 mi ENE Fernley, NV

Mon, Apr 14	10:31:39	9:42:49	1.8 mi NNE White Center, WA	26.9 mi SSE Yreka, CA

Carrier Name: Xross Integrated Transport
Carrier Address: 218 E Bedford St, Dimmitt TX 79027
Carrier US DOT Number: 2195271

ELD Provider & ID: Samsara (82K7)

Driver: Richard Ivan Woods (RichardI)
App: Signed into v.2530.200.15543
Driver License: TX 13779825
Ruleset: USA Property (8/70)
Vehicles: 1022
Home Terminal Name: Xross Integrated Transport
Home Terminal Address: 218 E Bedford St, Dimmitt TX 79027

Shipping ID: 1277955609/ A/C units
Trailer Name: LB22
Distance: 545 mi

Richard Ivan Woods — Mon, Apr 14

Certified on 04/14/2025 at 11:05 PM

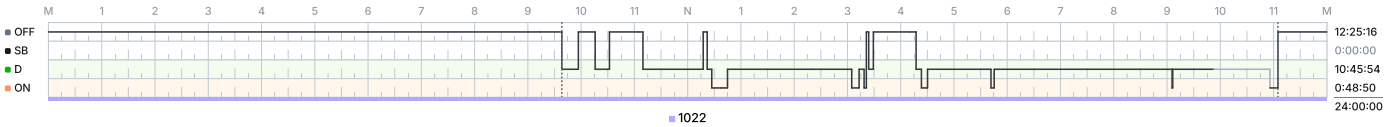

Time	Duration	Status	Remark	Vehicle	Odometer	Location
12:00:00 AM CDT - 9:14:27 AM CDT	9h 14m	OFF DUTY		1022	63,685 mi	1.8 mi NNE White Center, WA
9:14:27 AM CDT - 9:38:14 AM CDT	23m 47s	OFF DUTY	Misattributed Duty Status Time	1022	63,685 mi	1.8 mi NNE White Center, WA
9:38:14 AM CDT - 9:38:15 AM CDT	1s	OFF DUTY	Misattributed Duty Status Time	1022	63,685 mi	1.8 mi NNE White Center, WA
9:38:15 AM CDT - 9:56:53 AM CDT	18m 37s	DRIVING(ELD)		1022	63,685 mi	1.8 mi NNE White Center, WA
9:56:53 AM CDT - 10:15:49 AM CDT	18m 56s	OFF DUTY		1022	63,688 mi	3.1 mi S Seattle, WA
10:15:49 AM CDT - 10:31:55 AM CDT	16m 5s	DRIVING(ELD)		1022	63,688 mi	3.1 mi S Seattle, WA
10:31:55 AM CDT - 11:04:47 AM CDT	32m 51s	OFF DUTY	Misattributed Duty Status Time	1022	63,691 mi	2.5 mi NNE White Center, WA
11:04:47 AM CDT - 11:09:39 AM CDT	4m 52s	OFF DUTY		1022	63,691 mi	2.5 mi NNE White Center, WA
11:09:39 AM CDT - 12:17:31 PM CDT	1h 7m	DRIVING(ELD)		1022	63,691 mi	2.5 mi NNE White Center, WA

Time	Duration	Status	Remark	Vehicle	Odometer	Location
12:17:31 PM CDT - 12:22:01 PM CDT	4m 30s	OFF DUTY		1022	63,753 mi	4.1 mi SSW Tumwater, WA
12:22:01 PM CDT - 12:27:09 PM CDT	5m 7s	DRIVING(ELD)		1022	63,753 mi	4.1 mi SSW Tumwater, WA
12:27:09 PM CDT - 12:37:32 PM CDT	10m 23s	ON DUTY		1022	63,753 mi	4.1 mi SSW Tumwater, WA
12:37:32 PM CDT - 12:44:53 PM CDT	7m 20s	ON DUTY		1022	63,753 mi	4.2 mi SSW Tumwater, WA
12:44:53 PM CDT - 2:19:20 PM CDT	1h 34m	DRIVING(ELD)		1022	63,753 mi	4.2 mi SSW Tumwater, WA
2:19:20 PM CDT - 3:04:49 PM CDT	45m 28s	DRIVING(ELD)		1022	63,854 mi	4.2 mi SW Mill Plain, WA
3:04:49 PM CDT - 3:13:07 PM CDT	8m 17s	ON DUTY		1022	63,884 mi	3.0 mi N Molalla, OR
3:13:07 PM CDT - 3:18:45 PM CDT	5m 37s	DRIVING(ELD)		1022	63,884 mi	3.0 mi N Molalla, OR
3:18:45 PM CDT - 3:21:17 PM CDT	2m 31s	ON DUTY		1022	63,884 mi	3.0 mi N Molalla, OR
3:21:17 PM CDT - 3:23:56 PM CDT	2m 39s	OFF DUTY		1022	63,884 mi	3.0 mi N Molalla, OR
3:23:56 PM CDT - 3:29:10 PM CDT	5m 13s	DRIVING(ELD)		1022	63,884 mi	3.1 mi N Molalla, OR
3:29:10 PM CDT - 4:09:44 PM CDT	40m 33s	OFF DUTY	Misattributed Duty Status Time	1022	63,884 mi	3.1 mi N Molalla, OR
4:09:44 PM CDT - 4:17:18 PM CDT	7m 34s	OFF DUTY	Misattributed Duty Status Time	1022	63,884 mi	3.1 mi N Molalla, OR
4:17:18 PM CDT - 4:17:19 PM CDT	1s	OFF DUTY	Misattributed Duty Status Time	1022	63,885 mi	2.9 mi N Molalla, OR
4:17:19 PM CDT - 4:23:19 PM CDT	5m 59s	DRIVING(ELD)		1022	63,885 mi	2.9 mi N Molalla, OR
4:23:19 PM CDT - 4:30:12 PM CDT	6m 53s	ON DUTY		1022	63,885 mi	3.0 mi N Molalla, OR
4:30:12 PM CDT - 5:41:40 PM CDT	1h 11m	DRIVING(ELD)		1022	63,885 mi	3.1 mi N Molalla, OR
5:41:40 PM CDT - 5:45:17 PM CDT	3m 37s	ON DUTY		1022	63,932 mi	7.6 mi NNE Albany, OR
5:45:17 PM CDT - 9:05:41 PM CDT	3h 20m	DRIVING(ELD)		1022	63,932 mi	7.6 mi NNE Albany, OR
9:05:41 PM CDT - 9:06:23 PM CDT	42s	ON DUTY		1022	64,131 mi	7.2 mi WNW Central Point, OR
9:06:23 PM CDT - 9:52:49 PM CDT	46m 25s	DRIVING(ELD)		1022	64,131 mi	7.2 mi WNW Central Point, OR

Time	Duration	Status	Remark	Vehicle	Odometer	Location
9:52:49 PM CDT - 10:55:54 PM CDT	1h 3m	DRIVING(ELD) Ignored (PC)	Parking	1022	64,171 mi	14.0 mi SSE Ashland, OR
10:55:54 PM CDT - 11:04:57 PM CDT	9m 3s	ON DUTY		1022	64,223 mi	26.9 mi SSE Yreka, CA
11:04:57 PM CDT - 12:00:00 AM CDT	55m 3s	OFF DUTY		1022	64,223 mi	26.9 mi SSE Yreka, CA

Sun, Apr 13	5:08:42	5:07:35	14.4 mi ESE Pendleton, OR	1.8 mi NNE White Center, WA

Carrier Name: Xross Integrated Transport
Carrier Address: 218 E Bedford St, Dimmitt TX 79027
Carrier US DOT Number: 2195271

ELD Provider & ID: Samsara (82K7)

Driver: Richard Ivan Woods (RichardI)
App: Signed into v.2530.200.15543
Driver License: TX 13779825
Ruleset: USA Property (8/70)
Vehicles: 1022
Home Terminal Name: Xross Integrated Transport
Home Terminal Address: 218 E Bedford St, Dimmitt TX 79027

Shipping ID: 1277955609/ A/C units
Trailer Name: LB22
Distance: 307 mi

Richard Ivan Woods — Sun, Apr 13

Certified on 04/13/2025 at 5:30 PM

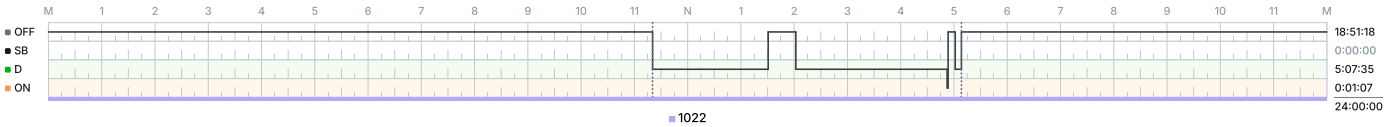

Time	Duration	Status	Remark	Vehicle	Odometer	Location
12:00:00 AM CDT - 10:49:30 AM CDT	10h 49m	OFF DUTY		1022	63,383 mi	14.4 mi ESE Pendleton, OR
10:49:30 AM CDT - 11:00:14 AM CDT	10m 44s	OFF DUTY	Misattributed Duty Status Time	1022	63,383 mi	14.4 mi ESE Pendleton, OR
11:00:14 AM CDT - 11:20:29 AM CDT	20m 15s	OFF DUTY		1022	63,383 mi	14.4 mi ESE Pendleton, OR
11:20:29 AM CDT - 12:14:27 PM CDT	53m 57s	DRIVING(ELD)		1022	63,383 mi	14.4 mi ESE Pendleton, OR
12:14:27 PM CDT - 1:30:42 PM CDT	1h 16m	DRIVING(ELD)		1022	63,441 mi	1.2 mi NNE Umatilla, OR
1:30:42 PM CDT - 2:01:52 PM CDT	31m 10s	OFF DUTY		1022	63,521 mi	2.4 mi NE Toppenish, WA
2:01:52 PM CDT - 4:52:16 PM CDT	2h 50m	DRIVING(ELD)		1022	63,521 mi	2.4 mi NE Toppenish, WA
4:52:16 PM CDT - 4:53:23 PM CDT	1m 7s	ON DUTY		1022	63,684 mi	1.3 mi NE White Center, WA
4:53:23 PM CDT - 5:01:25 PM CDT	8m 1s	OFF DUTY		1022	63,684 mi	1.3 mi NE White Center, WA

Time	Duration	Status	Remark	Vehicle	Odometer	Location
5:01:25 PM CDT - 5:08:23 PM CDT	6m 57s	DRIVING(ELD)		1022	63,684 mi	1.3 mi NE White Center, WA
5:08:23 PM CDT - 5:18:40 PM CDT	10m 17s	OFF DUTY		1022	63,685 mi	1.8 mi NNE White Center, WA
5:18:40 PM CDT - 5:30:12 PM CDT	11m 32s	OFF DUTY	Misattributed Duty Status Time	1022	63,685 mi	1.8 mi NNE White Center, WA
5:30:12 PM CDT - 12:00:00 AM CDT	6h 29m	OFF DUTY		1022	63,685 mi	1.8 mi NNE White Center, WA

Sat, Apr 12	11:27:50	10:49:08	46.7 mi E Rock Springs, WY	14.4 mi ESE Pendleton, OR

Carrier Name: Xross Integrated Transport
Carrier Address: 218 E Bedford St, Dimmitt TX 79027
Carrier US DOT Number: 2195271

ELD Provider & ID: Samsara (82K7)

Driver: Richard Ivan Woods (RichardI)
App: Signed into v.2530.200.15543
Driver License: TX 13779825
Ruleset: USA Property (8/70)
Vehicles: 1022
Home Terminal Name: Xross Integrated Transport
Home Terminal Address: 218 E Bedford St, Dimmitt TX 79027

Shipping ID: 1277955609/ A/C units
Trailer Name: LB22
Distance: 733 mi

Richard Ivan Woods — Sat, Apr 12

Certified on 04/12/2025 at 11:59 PM

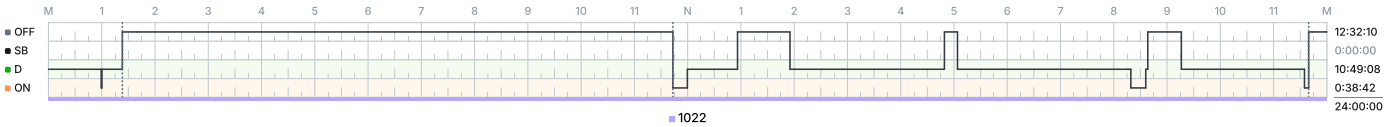

Time	Duration	Status	Remark	Vehicle	Odometer	Location
12:00:00 AM CDT - 12:59:23 AM CDT	59m 23s	DRIVING(ELD)		1022	62,660 mi	46.7 mi E Rock Springs, WY
12:59:23 AM CDT - 1:00:14 AM CDT	51s	ON DUTY		1022	62,724 mi	1.1 mi ESE Green River, WY
1:00:14 AM CDT - 1:23:14 AM CDT	22m 59s	DRIVING(ELD)		1022	62,724 mi	1.1 mi ESE Green River, WY
1:23:14 AM CDT - 1:39:35 AM CDT	16m 21s	OFF DUTY	Misattributed Duty Status Time	1022	62,745 mi	18.8 mi W Green River, WY
1:39:35 AM CDT - 11:43:19 AM CDT	10h 3m	OFF DUTY		1022	62,745 mi	18.8 mi W Green River, WY
11:43:19 AM CDT - 11:59:39 AM CDT	16m 20s	ON DUTY		1022	62,745 mi	18.8 mi W Green River, WY
11:59:39 AM CDT - 12:56:10 PM CDT	56m 30s	DRIVING(ELD)		1022	62,745 mi	18.8 mi W Green River, WY
12:56:10 PM CDT - 1:55:15 PM CDT	59m 5s	OFF DUTY		1022	62,809 mi	1.0 mi ENE Evanston, WY
1:55:15 PM CDT - 2:01:48 PM CDT	6m 32s	DRIVING(ELD)		1022	62,809 mi	1.0 mi E Evanston, WY

Time	Duration	Status	Remark	Vehicle	Odometer	Location
2:01:48 PM CDT - 4:09:39 PM CDT	2h 7m	DRIVING(ELD)		1022	62,815 mi	4.6 mi WSW Evanston, WY
4:09:39 PM CDT - 4:49:13 PM CDT	39m 33s	DRIVING(ELD)		1022	62,962 mi	39.7 mi WNW Tremonton, UT
4:49:13 PM CDT - 5:03:56 PM CDT	14m 43s	OFF DUTY		1022	63,008 mi	15.8 mi ESE Rupert, ID
5:03:56 PM CDT - 8:15:34 PM CDT	3h 11m	DRIVING(ELD)		1022	63,008 mi	15.8 mi ESE Rupert, ID
8:15:34 PM CDT - 8:19:13 PM CDT	3m 38s	DRIVING(ELD)		1022	63,234 mi	1.6 mi SE Ontario, OR
8:19:13 PM CDT - 8:36:00 PM CDT	16m 47s	ON DUTY	Fuel	1022	63,236 mi	0.5 mi E Ontario, OR
8:36:00 PM CDT - 8:38:18 PM CDT	2m 17s	DRIVING(ELD)		1022	63,236 mi	0.5 mi E Ontario, OR
8:38:18 PM CDT - 9:16:06 PM CDT	37m 48s	OFF DUTY		1022	63,236 mi	0.5 mi E Ontario, OR
9:16:06 PM CDT - 11:34:48 PM CDT	2h 18m	DRIVING(ELD)		1022	63,236 mi	0.5 mi E Ontario, OR
11:34:48 PM CDT - 11:39:31 PM CDT	4m 43s	ON DUTY		1022	63,383 mi	14.4 mi ESE Pendleton, OR
11:39:31 PM CDT - 11:43:55 PM CDT	4m 24s	OFF DUTY		1022	63,383 mi	14.4 mi ESE Pendleton, OR
11:43:55 PM CDT - 11:59:10 PM CDT	15m 15s	OFF DUTY	Misattributed Duty Status Time	1022	63,383 mi	14.4 mi ESE Pendleton, OR
11:59:10 PM CDT - 12:00:00 AM CDT	50s	OFF DUTY		1022	63,383 mi	14.4 mi ESE Pendleton, OR

Fri, Apr 11	11:53:20	11:11:17	1.7 mi ENE Dalhart, TX	1.6 mi NW Laramie, WY

Carrier Name: Xross Integrated Transport
Carrier Address: 218 E Bedford St, Dimmitt TX 79027
Carrier US DOT Number: 2195271

ELD Provider & ID: Samsara (82K7)

Driver: Richard Ivan Woods (RichardI)
App: Signed into v.2530.200.15543
Driver License: TX 13779825
Ruleset: USA Property (8/70)
Vehicles: 1022
Home Terminal Name: Xross Integrated Transport
Home Terminal Address: 218 E Bedford St, Dimmitt TX 79027

Shipping ID: 1277955609/ A/C units
Trailer Name: LB22
Distance: 652 mi

Richard Ivan Woods — Fri, Apr 11

Certified on 04/12/2025 at 1:44 AM

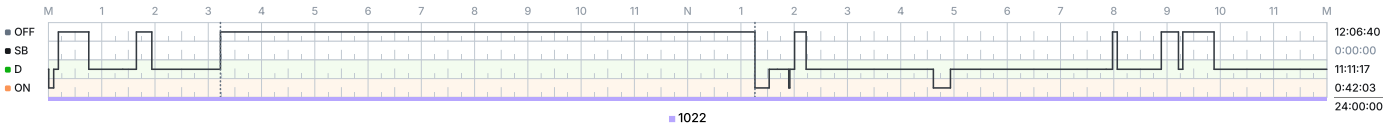

Time	Duration	Status	Remark	Vehicle	Odometer	Location
12:00:00 AM CDT - 12:00:18 AM CDT	18s	DRIVING(ELD)		1022	62,017 mi	1.7 mi ENE Dalhart, TX DBFW12.9
12:00:18 AM CDT - 12:05:52 AM CDT	5m 34s	ON DUTY		1022	62,017 mi	1.7 mi ENE Dalhart, TX Dalhart shop
12:05:52 AM CDT - 12:11:09 AM CDT	5m 16s	DRIVING(ELD)		1022	62,018 mi	1.7 mi ENE Dalhart, TX Dalhart shop
12:11:09 AM CDT - 12:45:23 AM CDT	34m 14s	OFF DUTY	Misattributed Duty Status Time	1022	62,018 mi	1.7 mi ENE Dalhart, TX Dalhart shop
12:45:23 AM CDT - 12:45:24 AM CDT	1s	OFF DUTY	Misattributed Duty Status Time	1022	62,018 mi	1.7 mi ENE Dalhart, TX Dalhart shop
12:45:24 AM CDT - 1:23:42 AM CDT	38m 17s	DRIVING(ELD)		1022	62,018 mi	1.7 mi ENE Dalhart, TX Dalhart shop
1:23:42 AM CDT - 1:39:02 AM CDT	15m 19s	DRIVING(ELD)		1022	62,056 mi	37.3 mi NW Dalhart, TX General Ag Exempt Area
1:39:02 AM CDT - 1:56:26 AM CDT	17m 24s	OFF DUTY		1022	62,065 mi	45.7 mi NW Dalhart, TX General Ag Exempt Area
1:56:26 AM CDT - 3:13:43 AM CDT	1h 17m	DRIVING(ELD)		1022	62,065 mi	45.7 mi NW Dalhart, TX General Ag Exempt Area

Time	Duration	Status	Remark	Vehicle	Odometer	Location
3:13:43 AM CDT - 1:15:48 PM CDT	10h 2m	OFF DUTY		1022	62,146 mi	1.4 mi SSE Raton, NM
1:15:48 PM CDT - 1:31:49 PM CDT	16m 1s	ON DUTY		1022	62,146 mi	1.4 mi SSE Raton, NM
1:31:49 PM CDT - 1:41:04 PM CDT	9m 15s	DRIVING(ELD)		1022	62,146 mi	1.5 mi SSE Raton, NM
1:41:04 PM CDT - 1:53:53 PM CDT	12m 48s	DRIVING(ELD)		1022	62,155 mi	6.8 mi NNW Raton, NM
1:53:53 PM CDT - 1:55:07 PM CDT	1m 14s	ON DUTY		1022	62,166 mi	2.5 mi SSW Trinidad, CO
1:55:07 PM CDT - 2:00:26 PM CDT	5m 18s	DRIVING(ELD)		1022	62,166 mi	2.4 mi SSW Trinidad, CO
2:00:26 PM CDT - 2:13:26 PM CDT	13m	OFF DUTY	Misattributed Duty Status Time	1022	62,166 mi	2.4 mi SSW Trinidad, CO
2:13:26 PM CDT - 2:13:27 PM CDT	1s	OFF DUTY	Misattributed Duty Status Time	1022	62,166 mi	2.4 mi SSW Trinidad, CO
2:13:27 PM CDT - 4:36:47 PM CDT	2h 23m	DRIVING(ELD)		1022	62,166 mi	2.4 mi SSW Trinidad, CO
4:36:47 PM CDT - 4:56:00 PM CDT	19m 13s	ON DUTY		1022	62,311 mi	1.7 mi WNW Gleneagle, CO
4:56:00 PM CDT - 7:51:25 PM CDT	2h 55m	DRIVING(ELD)		1022	62,311 mi	1.7 mi WNW Gleneagle, CO
7:51:25 PM CDT - 7:58:34 PM CDT	7m 8s	DRIVING(ELD)		1022	62,449 mi	10.7 mi SSW Cheyenne, WY
7:58:34 PM CDT - 8:03:55 PM CDT	5m 21s	OFF DUTY		1022	62,456 mi	4.3 mi SSW Cheyenne, WY
8:03:55 PM CDT - 8:53:32 PM CDT	49m 36s	DRIVING(ELD)		1022	62,456 mi	4.3 mi SSW Cheyenne, WY
8:53:32 PM CDT - 9:12:52 PM CDT	19m 20s	OFF DUTY		1022	62,507 mi	1.9 mi NW Laramie, WY
9:12:52 PM CDT - 9:17:45 PM CDT	4m 52s	DRIVING(ELD)		1022	62,507 mi	1.9 mi NW Laramie, WY
9:17:45 PM CDT - 9:52:59 PM CDT	35m 14s	OFF DUTY		1022	62,508 mi	1.6 mi NW Laramie, WY
9:52:59 PM CDT - 12:00:00 AM CDT	2h 7m	DRIVING(ELD)		1022	62,508 mi	1.6 mi NW Laramie, WY

Thu, Apr 10	0:04:59	0:04:59	1.7 mi ENE Dalhart, TX	1.7 mi ENE Dalhart, TX

Carrier Name: Xross Integrated Transport
Carrier Address: 218 E Bedford St, Dimmitt TX 79027
Carrier US DOT Number: 2195271

ELD Provider & ID: Samsara (82K7)

Driver: Richard Ivan Woods (RichardI)
App: Signed into v.2530.200.15543
Driver License: TX 13779825
Ruleset: USA Property (8/70)
Vehicles: 1022
Home Terminal Name: Xross Integrated Transport
Home Terminal Address: 218 E Bedford St, Dimmitt TX 79027

Shipping ID: 1277955609/ A/C units
Trailer Name: LB22
Distance: - mi

Richard Ivan Woods — Thu, Apr 10

Certified on 04/11/2025 at 4:07 AM

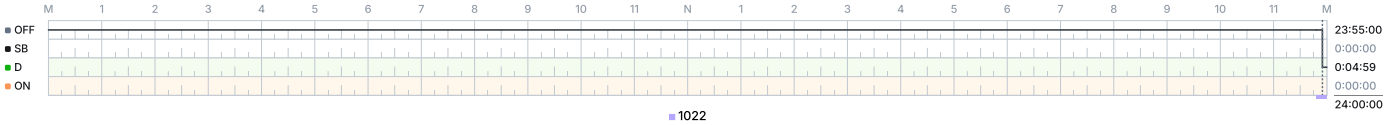

Time	Duration	Status	Remark	Vehicle	Odometer	Location
12:00:00 AM CDT - 11:48:26 PM CDT	23h 48m	OFF DUTY		-	-	1.7 mi ENE Dalhart, TX Dalhart shop
11:48:26 PM CDT - 11:55:00 PM CDT	6m 33s	OFF DUTY		1022	62,017 mi	1.7 mi ENE Dalhart, TX No parking Zone Dalhart Shop
11:55:00 PM CDT - 12:00:00 AM CDT	4m 59s	DRIVING(ELD)		1022	62,017 mi	1.7 mi ENE Dalhart, TX DBFW12.9

Wed, Apr 9	5:04:59	4:21:45	23.6 mi WSW Dumas, TX	1.7 mi ENE Dalhart, TX

Carrier Name: Xross Integrated Transport
Carrier Address: 218 E Bedford St, Dimmitt TX 79027
Carrier US DOT Number: 2195271

ELD Provider & ID: Samsara (82K7)

Driver: Richard Ivan Woods (RichardI)
App: Signed into v.2530.200.15543
Driver License: TX 13779825
Ruleset: USA Property (8/70)
Vehicles: 587 (R583864)
Home Terminal Name: Xross Integrated Transport
Home Terminal Address: 218 E Bedford St, Dimmitt TX 79027

Shipping ID: 243463765 gypsum, 26158846 pavers, 00101726 wood, 6746 hay
Trailer Name: LB26
Distance: 206 mi

Richard Ivan Woods — Wed, Apr 9

Certified on 04/09/2025 at 5:03 PM

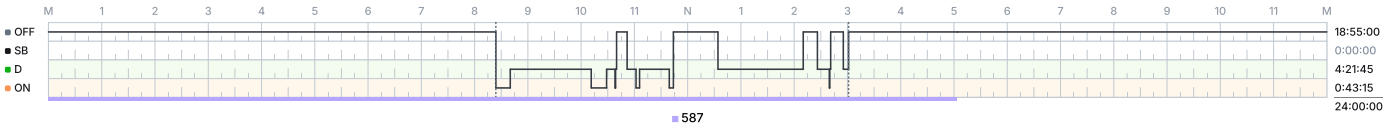

Time	Duration	Status	Remark	Vehicle	Odometer	Location
12:00:00 AM CDT - 8:23:57 AM CDT	8h 23m	OFF DUTY		587	-	23.6 mi WSW Dumas, TX General Ag Exempt Area
8:23:57 AM CDT - 8:40:11 AM CDT	16m 14s	ON DUTY		587	310,262 mi	23.6 mi WSW Dumas, TX General Ag Exempt Area
8:40:11 AM CDT - 10:11:23 AM CDT	1h 31m	DRIVING(ELD)		587	310,262 mi	23.6 mi WSW Dumas, TX General Ag Exempt Area
10:11:23 AM CDT - 10:28:41 AM CDT	17m 18s	ON DUTY	Unloading	587	310,340 mi	11.6 mi ENE Hereford, TX General Ag Exempt Area
10:28:41 AM CDT - 10:38:11 AM CDT	9m 29s	DRIVING(ELD)		587	310,340 mi	11.6 mi ENE Hereford, TX General Ag Exempt Area
10:38:11 AM CDT - 10:38:50 AM CDT	39s	ON DUTY		587	310,341 mi	11.9 mi ENE Hereford, TX General Ag Exempt Area
10:38:50 AM CDT - 10:39:56 AM CDT	1m 5s	DRIVING(ELD)		587	310,341 mi	11.9 mi ENE Hereford, TX General Ag Exempt Area
10:39:56 AM CDT - 10:51:49 AM CDT	11m 53s	OFF DUTY		587	310,341 mi	11.8 mi ENE Hereford, TX General Ag Exempt Area
10:51:49 AM CDT - 11:01:52 AM CDT	10m 2s	DRIVING(ELD)		587	310,341 mi	11.8 mi ENE Hereford, TX General Ag Exempt Area

Time	Duration	Status	Remark	Vehicle	Odometer	Location
11:01:52 AM CDT - 11:05:50 AM CDT	3m 58s	ON DUTY		587	310,342 mi	11.4 mi ENE Hereford, TX General Ag Exempt Area
11:05:50 AM CDT - 11:39:18 AM CDT	33m 27s	DRIVING(ELD)		587	310,342 mi	11.4 mi ENE Hereford, TX General Ag Exempt Area
11:39:18 AM CDT - 11:43:55 AM CDT	4m 37s	ON DUTY		587	310,366 mi	5.3 mi N Canyon, TX General Ag Exempt Area
11:43:55 AM CDT - 12:34:09 PM CDT	50m 13s	OFF DUTY		587	310,366 mi	5.3 mi N Canyon, TX General Ag Exempt Area
12:34:09 PM CDT - 2:10:12 PM CDT	1h 36m	DRIVING(ELD)		587	310,366 mi	5.3 mi N Canyon, TX General Ag Exempt Area
2:10:12 PM CDT - 2:26:10 PM CDT	15m 58s	OFF DUTY		587	310,464 mi	0.4 mi SE Dalhart, TX Toot n Tootum Dalhart,
2:26:10 PM CDT - 2:39:35 PM CDT	13m 24s	DRIVING(ELD)		587	310,464 mi	0.4 mi SE Dalhart, TX Dalhart, TX
2:39:35 PM CDT - 2:40:03 PM CDT	28s	ON DUTY		587	310,467 mi	1.7 mi ENE Dalhart, TX Dalhart shop
2:40:03 PM CDT - 2:41:06 PM CDT	1m 2s	DRIVING(ELD)		587	310,467 mi	1.7 mi ENE Dalhart, TX Dalhart shop
2:41:06 PM CDT - 2:55:20 PM CDT	14m 14s	OFF DUTY		587	310,467 mi	1.7 mi ENE Dalhart, TX Dalhart shop
2:55:20 PM CDT - 3:01:16 PM CDT	5m 55s	DRIVING(ELD)		587	310,467 mi	1.7 mi ENE Dalhart, TX Dalhart shop
3:01:16 PM CDT - 5:03:53 PM CDT	2h 2m	OFF DUTY	Break	587	310,468 mi	1.7 mi ENE Dalhart, TX Dalhart shop
5:03:53 PM CDT - 5:03:55 PM CDT	2s	OFF DUTY		587	310,468 mi	1.7 mi ENE Dalhart, TX Dalhart shop
5:03:55 PM CDT - 12:00:00 AM CDT	6h 56m	OFF DUTY		-	-	1.7 mi ENE Dalhart, TX Dalhart shop

Tue, Apr 8	11:19:22	9:18:58	2.3 mi SE Commerce City, CO	23.6 mi WSW Dumas, TX

Carrier Name: Xross Integrated Transport
Carrier Address: 218 E Bedford St, Dimmitt TX 79027
Carrier US DOT Number: 2195271

ELD Provider & ID: Samsara (82K7)

Driver: Richard Ivan Woods (RichardI)
App: Signed into v.2530.200.15543
Driver License: TX 13779825
Ruleset: USA Property (8/70)
Vehicles: 587 (R583864)
Home Terminal Name: Xross Integrated Transport
Home Terminal Address: 218 E Bedford St, Dimmitt TX 79027

Shipping ID: 243463765 gypsum, 26158846 pavers, 00101726 wood, 6746 hay
Trailer Name: LB26
Distance: 550 mi

Richard Ivan Woods — Tue, Apr 8

Certified on 04/09/2025 at 7:16 AM

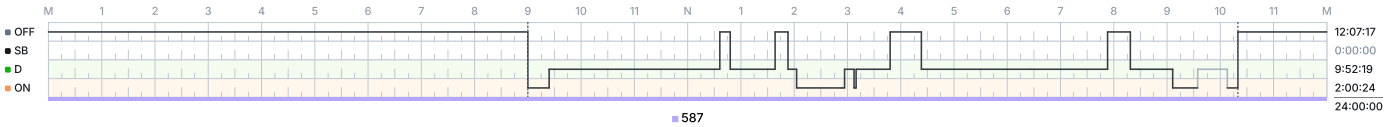

Time	Duration	Status	Remark	Vehicle	Odometer	Location
12:00:00 AM CDT - 8:59:56 AM CDT	8h 59m	OFF DUTY		587	-	2.3 mi SE Commerce City, CO
8:59:56 AM CDT - 9:23:57 AM CDT	24m 1s	ON DUTY		587	309,711 mi	2.3 mi SE Commerce City, CO
9:23:57 AM CDT - 12:36:14 PM CDT	3h 12m	DRIVING(ELD)		587	309,711 mi	2.3 mi SE Commerce City, CO
12:36:14 PM CDT - 12:47:58 PM CDT	11m 44s	OFF DUTY		587	309,885 mi	24.6 mi S Salida, CO
12:47:58 PM CDT - 1:38:30 PM CDT	50m 31s	DRIVING(ELD)		587	309,885 mi	24.6 mi S Salida, CO
1:38:30 PM CDT - 1:53:01 PM CDT	14m 31s	OFF DUTY		587	309,931 mi	28.0 mi NNW Alamosa, CO
1:53:01 PM CDT - 2:02:44 PM CDT	9m 42s	DRIVING(ELD)		587	309,931 mi	28.0 mi NNW Alamosa, CO
2:02:44 PM CDT - 2:53:30 PM CDT	50m 45s	ON DUTY		587	309,932 mi	27.2 mi NNW Alamosa, CO
2:53:30 PM CDT - 2:56:44 PM CDT	3m 14s	ON DUTY		587	309,932 mi	27.2 mi NNW Alamosa, CO

Time	Duration	Status	Remark	Vehicle	Odometer	Location
2:56:44 PM CDT - 3:07:26 PM CDT	10m 41s	DRIVING(ELD)		587	309,932 mi	27.2 mi NNW Alamosa, CO
3:07:26 PM CDT - 3:09:45 PM CDT	2m 19s	ON DUTY		587	309,933 mi	28.0 mi NNW Alamosa, CO
3:09:45 PM CDT - 3:48:04 PM CDT	38m 18s	DRIVING(ELD)		587	309,933 mi	28.0 mi NNW Alamosa, CO
3:48:04 PM CDT - 4:23:16 PM CDT	35m 12s	OFF DUTY		587	309,969 mi	0.8 mi ENE Alamosa, CO
4:23:16 PM CDT - 6:25:54 PM CDT	2h 2m	DRIVING(ELD)		587	309,969 mi	0.8 mi ENE Alamosa, CO
6:25:54 PM CDT - 7:53:00 PM CDT	1h 27m	DRIVING(ELD)		587	310,091 mi	6.6 mi NNW Raton, NM
7:53:00 PM CDT - 8:18:40 PM CDT	25m 40s	OFF DUTY		587	310,182 mi	45.4 mi NW Dalhart, TX General Ag Exempt Area
8:18:40 PM CDT - 8:27:20 PM CDT	8m 39s	DRIVING(ELD)		587	310,182 mi	45.4 mi NW Dalhart, TX General Ag Exempt Area
8:27:20 PM CDT - 9:06:21 PM CDT	39m	DRIVING(ELD)		587	310,191 mi	37.2 mi NW Dalhart, TX General Ag Exempt Area
9:06:21 PM CDT - 9:34:31 PM CDT	28m 10s	ON DUTY		587	310,230 mi	1.7 mi ENE Dalhart, TX Dalhart shop
9:34:31 PM CDT - 10:07:52 PM CDT	33m 20s	DRIVING(ELD) Ignored (PC)	Parking	587	310,230 mi	1.7 mi ENE Dalhart, TX DBFW12.8
10:07:52 PM CDT - 10:19:46 PM CDT	11m 54s	ON DUTY		587	310,262 mi	23.6 mi WSW Dumas, TX General Ag Exempt Area
10:19:46 PM CDT - 12:00:00 AM CDT	1h 40m	OFF DUTY		587	310,262 mi	23.6 mi WSW Dumas, TX General Ag Exempt Area

Mon, Apr 7	1:37:39	0:44:59	1.6 mi NNE Derby, CO	2.3 mi SE Commerce City, CO

Carrier Name: Xross Integrated Transport
Carrier Address: 218 E Bedford St, Dimmitt TX 79027
Carrier US DOT Number: 2195271

ELD Provider & ID: Samsara (82K7)

Driver: Richard Ivan Woods (RichardI)
App: Signed into v.2530.200.15543
Driver License: TX 13779825
Ruleset: USA Property (8/70)
Vehicles: 587 (R583864)
Home Terminal Name: Xross Integrated Transport
Home Terminal Address: 218 E Bedford St, Dimmitt TX 79027

Shipping ID: 243463765 gypsum, 26158846 pavers, 00101726 wood
Trailer Name: LB26
Distance: 11 mi

Richard Ivan Woods — Mon, Apr 7

Certified on 04/07/2025 at 11:17 PM

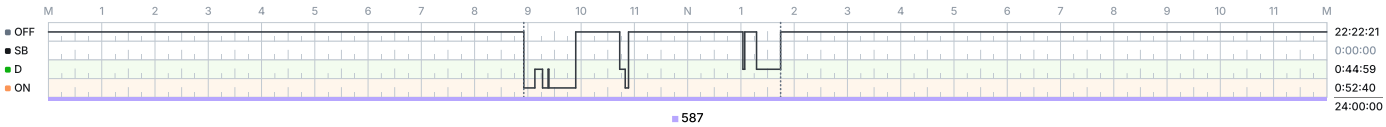

Time	Duration	Status	Remark	Vehicle	Odometer	Location
12:00:00 AM CDT - 8:55:24 AM CDT	8h 55m	OFF DUTY		587	-	1.6 mi NNE Derby, CO
8:55:24 AM CDT - 9:07:55 AM CDT	12m 31s	ON DUTY		587	309,698 mi	1.6 mi NNE Derby, CO
9:07:55 AM CDT - 9:16:33 AM CDT	8m 37s	DRIVING(ELD)		587	309,699 mi	1.6 mi NNE Derby, CO
9:16:33 AM CDT - 9:22:46 AM CDT	6m 13s	ON DUTY		587	309,701 mi	2.5 mi NE Derby, CO
9:22:46 AM CDT - 9:23:43 AM CDT	56s	DRIVING(ELD)		587	309,701 mi	2.5 mi NE Derby, CO
9:23:43 AM CDT - 9:53:56 AM CDT	30m 13s	ON DUTY		587	309,701 mi	2.5 mi NE Derby, CO
9:53:56 AM CDT - 10:43:28 AM CDT	49m 32s	OFF DUTY		587	309,701 mi	2.5 mi NE Derby, CO
10:43:28 AM CDT - 10:49:40 AM CDT	6m 11s	DRIVING(ELD)		587	309,701 mi	2.5 mi NE Derby, CO
10:49:40 AM CDT - 10:53:23 AM CDT	3m 42s	ON DUTY		587	309,701 mi	2.6 mi NE Derby, CO

Time	Duration	Status	Remark	Vehicle	Odometer	Location
10:53:23 AM CDT - 1:02:14 PM CDT	2h 8m	OFF DUTY		587	309,701 mi	2.6 mi NE Derby, CO
1:02:14 PM CDT - 1:04:19 PM CDT	2m 4s	DRIVING(ELD)		587	309,701 mi	2.6 mi NE Derby, CO
1:04:19 PM CDT - 1:17:36 PM CDT	13m 17s	OFF DUTY		587	309,701 mi	2.8 mi NE Derby, CO
1:17:36 PM CDT - 1:44:43 PM CDT	27m 6s	DRIVING(ELD)		587	309,701 mi	2.7 mi NE Derby, CO
1:44:43 PM CDT - 12:00:00 AM CDT	10h 15m	OFF DUTY		587	309,711 mi	2.3 mi SE Commerce City, CO

Sun, Apr 6	0:00:00	0:00:00	1.6 mi NNE Derby, CO	1.6 mi NNE Derby, CO

Carrier Name: Xross Integrated Transport
Carrier Address: 218 E Bedford St, Dimmitt TX 79027
Carrier US DOT Number: 2195271

ELD Provider & ID: Samsara (82K7)

Driver: Richard Ivan Woods (RichardI)
App: Signed into v.2530.200.15543
Driver License: TX 13779825
Ruleset: USA Property (8/70)
Vehicles: 587 (R583864)
Home Terminal Name: Xross Integrated Transport
Home Terminal Address: 218 E Bedford St, Dimmitt TX 79027

Shipping ID: 243463765 gypsum, 26158846 pavers, 00101726 wood
Trailer Name: LB26
Distance: - mi

Richard Ivan Woods — Sun, Apr 6

Certified on 04/07/2025 at 8:53 AM

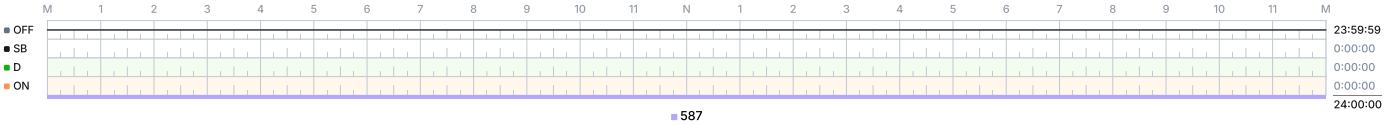

Time	Duration	Status	Remark	Vehicle	Odometer	Location
12:00:00 AM CDT - 12:00:00 AM CDT	24h	OFF DUTY		587	-	1.6 mi NNE Derby, CO

Sat, Apr 5	7:11:07	5:54:38	2.0 mi NNE Las Vegas, NM	1.6 mi NNE Derby, CO

Carrier Name: Xross Integrated Transport
Carrier Address: 218 E Bedford St, Dimmitt TX 79027
Carrier US DOT Number: 2195271

ELD Provider & ID: Samsara (82K7)

Driver: Richard Ivan Woods (RichardI)
App: Signed into v.2530.200.15543
Driver License: TX 13779825
Ruleset: USA Property (8/70)
Vehicles: 587 (R583864)
Home Terminal Name: Xross Integrated Transport
Home Terminal Address: 218 E Bedford St, Dimmitt TX 79027

Shipping ID: 243463765 gypsum, 26158846 pavers, 00101726 wood
Trailer Name: LB26
Distance: 338 mi

Richard Ivan Woods — Sat, Apr 5

Certified on 04/06/2025 at 6:23 PM

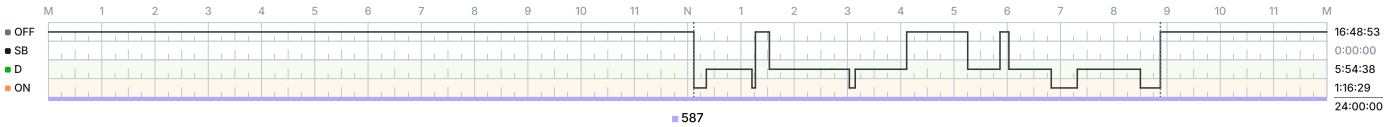

Time	Duration	Status	Remark	Vehicle	Odometer	Location
12:00:00 AM CDT - 12:06:53 PM CDT	12h 6m	OFF DUTY		587	309,358 mi	2.0 mi NNE Las Vegas, NM
12:06:53 PM CDT - 12:21:02 PM CDT	14m 9s	ON DUTY		587	309,358 mi	2.0 mi NNE Las Vegas, NM
12:21:02 PM CDT - 1:12:26 PM CDT	51m 24s	DRIVING(ELD)		587	309,358 mi	2.0 mi NNE Las Vegas, NM
1:12:26 PM CDT - 1:16:19 PM CDT	3m 52s	ON DUTY		587	309,399 mi	40.9 mi NE Las Vegas, NM
1:16:19 PM CDT - 1:32:04 PM CDT	15m 45s	OFF DUTY		587	309,399 mi	40.9 mi NE Las Vegas, NM
1:32:04 PM CDT - 2:42:36 PM CDT	1h 10m	DRIVING(ELD)		587	309,399 mi	40.9 mi NE Las Vegas, NM
2:42:36 PM CDT - 3:02:09 PM CDT	19m 33s	DRIVING(ELD)		587	309,473 mi	6.7 mi NNW Raton, NM
3:02:09 PM CDT - 3:08:46 PM CDT	6m 36s	ON DUTY		587	309,484 mi	2.4 mi SSW Trinidad, CO
3:08:46 PM CDT - 4:06:42 PM CDT	57m 55s	DRIVING(ELD)		587	309,484 mi	2.4 mi SSW Trinidad, CO

Time	Duration	Status	Remark	Vehicle	Odometer	Location
4:06:42 PM CDT - 5:15:27 PM CDT	1h 8m	OFF DUTY		587	309,548 mi	22.6 mi SSW Pueblo, CO
5:15:27 PM CDT - 5:51:50 PM CDT	36m 22s	DRIVING(ELD)		587	309,548 mi	22.6 mi SSW Pueblo, CO
5:51:50 PM CDT - 6:01:50 PM CDT	10m	OFF DUTY		587	309,588 mi	10.9 mi NNE Pueblo West, CO
6:01:50 PM CDT - 6:49:34 PM CDT	47m 43s	DRIVING(ELD)		587	309,588 mi	10.9 mi NNE Pueblo West, CO
6:49:34 PM CDT - 7:18:54 PM CDT	29m 19s	ON DUTY		587	309,633 mi	1.7 mi WNW Gleneagle, CO
7:18:54 PM CDT - 8:29:59 PM CDT	1h 11m	DRIVING(ELD)		587	309,633 mi	1.7 mi WNW Gleneagle, CO
8:29:59 PM CDT - 8:52:31 PM CDT	22m 32s	ON DUTY		587	309,698 mi	1.6 mi NNE Derby, CO
8:52:31 PM CDT - 12:00:00 AM CDT	3h 7m	OFF DUTY		587	309,698 mi	1.6 mi NNE Derby, CO

Fri, Apr 4	5:04:38	3:32:55	5.4 mi W Albuquerque, NM	2.0 mi NNE Las Vegas, NM

Carrier Name: Xross Integrated Transport
Carrier Address: 218 E Bedford St, Dimmitt TX 79027
Carrier US DOT Number: 2195271

ELD Provider & ID: Samsara (82K7)

Driver: Richard Ivan Woods (RichardI)
App: Signed into v.2530.200.15543
Driver License: TX 13779825
Ruleset: USA Property (8/70)
Vehicles: 587 (R583864)
Home Terminal Name: Xross Integrated Transport
Home Terminal Address: 218 E Bedford St, Dimmitt TX 79027

Shipping ID: 243463765 gypsum, 26158846 pavers, 00101726 wood
Trailer Name: LB26
Distance: 152 mi

Richard Ivan Woods — Fri, Apr 4

Certified on 04/05/2025 at 10:14 AM

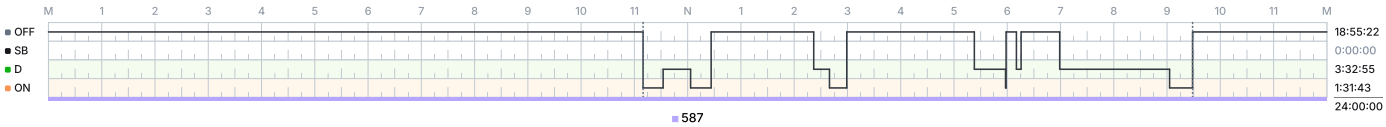

Time	Duration	Status	Remark	Vehicle	Odometer	Location
12:00:00 AM CDT - 11:09:48 AM CDT	11h 9m	OFF DUTY		587	309,205 mi	5.4 mi W Albuquerque, NM
11:09:48 AM CDT - 11:32:23 AM CDT	22m 35s	ON DUTY		587	309,205 mi	5.4 mi W Albuquerque, NM
11:32:23 AM CDT - 12:03:19 PM CDT	30m 55s	DRIVING(ELD)		587	309,205 mi	5.4 mi W Albuquerque, NM
12:03:19 PM CDT - 12:26:28 PM CDT	23m 8s	ON DUTY		587	309,219 mi	3.1 mi SE Albuquerque, NM
12:26:28 PM CDT - 2:22:00 PM CDT	1h 55m	OFF DUTY		587	309,219 mi	3.1 mi SE Albuquerque, NM
2:22:00 PM CDT - 2:39:45 PM CDT	17m 44s	DRIVING(ELD)		587	309,219 mi	3.1 mi SE Albuquerque, NM
2:39:45 PM CDT - 2:59:14 PM CDT	19m 28s	ON DUTY		587	309,224 mi	4.5 mi SE Albuquerque, NM
2:59:14 PM CDT - 5:22:56 PM CDT	2h 23m	OFF DUTY		587	309,224 mi	4.5 mi SE Albuquerque, NM
5:22:56 PM CDT - 5:58:05 PM CDT	35m 8s	DRIVING(ELD)		587	309,224 mi	4.4 mi SE Albuquerque, NM

Time	Duration	Status	Remark	Vehicle	Odometer	Location
5:58:05 PM CDT - 5:58:41 PM CDT	35s	ON DUTY		587	309,235 mi	2.3 mi NE Albuquerque, NM
5:58:41 PM CDT - 6:10:19 PM CDT	11m 38s	OFF DUTY		587	309,235 mi	2.3 mi NE Albuquerque, NM
6:10:19 PM CDT - 6:15:36 PM CDT	5m 16s	DRIVING(ELD)		587	309,235 mi	2.4 mi NE Albuquerque, NM
6:15:36 PM CDT - 6:59:04 PM CDT	43m 28s	OFF DUTY		587	309,235 mi	2.4 mi NE Albuquerque, NM
6:59:04 PM CDT - 9:02:52 PM CDT	2h 3m	DRIVING(ELD)		587	309,235 mi	2.4 mi NE Albuquerque, NM
9:02:52 PM CDT - 9:28:46 PM CDT	25m 53s	ON DUTY		587	309,358 mi	2.0 mi NNE Las Vegas, NM
9:28:46 PM CDT - 12:00:00 AM CDT	2h 31m	OFF DUTY		587	309,358 mi	2.0 mi NNE Las Vegas, NM

Thu, Apr 3	3:14:52	1:09:52	15.5 mi W South Valley, NM	5.4 mi W Albuquerque, NM

Carrier Name: Xross Integrated Transport
Carrier Address: 218 E Bedford St, Dimmitt TX 79027
Carrier US DOT Number: 2195271

ELD Provider & ID: Samsara (82K7)

Driver: Richard Ivan Woods (RichardI)
App: Signed into v.2530.200.15543
Driver License: TX 13779825
Ruleset: USA Property (8/70)
Vehicles: 587 (R583864)
Home Terminal Name: Xross Integrated Transport
Home Terminal Address: 218 E Bedford St, Dimmitt TX 79027

Shipping ID: 243463765 gypsum, 26158846 pavers, 00101726 wood
Trailer Name: LB26
Distance: 41 mi

Richard Ivan Woods — Thu, Apr 3

Certified on 04/04/2025 at 7:25 AM

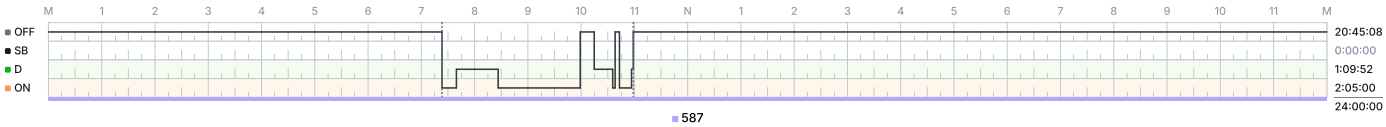

Time	Duration	Status	Remark	Vehicle	Odometer	Location
12:00:00 AM CDT - 7:23:17 AM CDT	7h 23m	OFF DUTY		587	309,164 mi	15.5 mi W South Valley, NM
7:23:17 AM CDT - 7:39:31 AM CDT	16m 14s	ON DUTY		587	309,164 mi	15.5 mi W South Valley, NM
7:39:31 AM CDT - 8:26:34 AM CDT	47m 2s	DRIVING(ELD)		587	309,164 mi	15.4 mi W South Valley, NM
8:26:34 AM CDT - 9:59:01 AM CDT	1h 32m	ON DUTY		587	309,191 mi	1.6 mi ESE North Valley, NM
9:59:01 AM CDT - 10:14:45 AM CDT	15m 44s	OFF DUTY		587	309,191 mi	1.5 mi ESE North Valley, NM
10:14:45 AM CDT - 10:35:36 AM CDT	20m 50s	DRIVING(ELD)		587	309,192 mi	1.7 mi ESE North Valley, NM
10:35:36 AM CDT - 10:38:19 AM CDT	2m 43s	ON DUTY		587	309,205 mi	5.4 mi W Albuquerque, NM
10:38:19 AM CDT - 10:43:11 AM CDT	4m 52s	OFF DUTY		587	309,205 mi	5.4 mi W Albuquerque, NM
10:43:11 AM CDT - 10:56:47 AM CDT	13m 36s	ON DUTY	Fuel	587	309,205 mi	5.4 mi W Albuquerque, NM

Time	Duration	Status	Remark	Vehicle	Odometer	Location
10:56:47 AM CDT - 10:58:45 AM CDT	1m 57s	DRIVING(ELD)		587	309,205 mi	5.4 mi W Albuquerque, NM
10:58:45 AM CDT - 12:00:00 AM CDT	13h 1m	OFF DUTY		587	309,205 mi	5.4 mi W Albuquerque, NM

Wed, Apr 2	9:30:32	8:30:45	43.5 mi NW Moab, UT	15.5 mi W South Valley, NM

Carrier Name: Xross Integrated Transport
Carrier Address: 218 E Bedford St, Dimmitt TX 79027
Carrier US DOT Number: 2195271

ELD Provider & ID: Samsara (82K7)

Driver: Richard Ivan Woods (RichardI)
App: Signed into v.2530.200.15543
Driver License: TX 13779825
Ruleset: USA Property (8/70)
Vehicles: 587 (R583864)
Home Terminal Name: Xross Integrated Transport
Home Terminal Address: 218 E Bedford St, Dimmitt TX 79027

Shipping ID: 243463765 gypsum, 26158846 pavers, 00101726 wood
Trailer Name: LB26
Distance: 420 mi

Richard Ivan Woods — Wed, Apr 2

Certified on 04/03/2025 at 7:23 AM

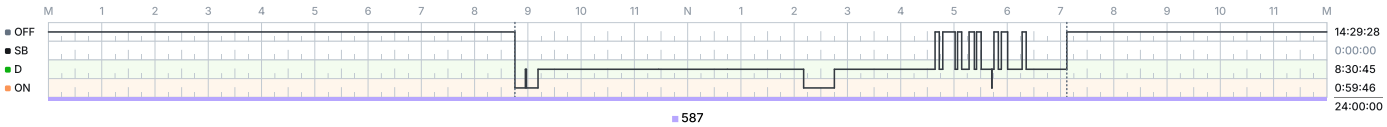

Time	Duration	Status	Remark	Vehicle	Odometer	Location
12:00:00 AM CDT - 8:45:25 AM CDT	8h 45m	OFF DUTY		587	308,742 mi	43.5 mi NW Moab, UT
8:45:25 AM CDT - 8:57:12 AM CDT	11m 47s	ON DUTY		587	308,742 mi	43.5 mi NW Moab, UT
8:57:12 AM CDT - 8:58:23 AM CDT	1m 10s	DRIVING(ELD)		587	308,742 mi	43.5 mi NW Moab, UT
8:58:23 AM CDT - 9:11:27 AM CDT	13m 4s	ON DUTY	Furl	587	308,742 mi	43.5 mi NW Moab, UT
9:11:27 AM CDT - 11:27:22 AM CDT	2h 15m	DRIVING(ELD)		587	308,742 mi	43.5 mi NW Moab, UT
11:27:22 AM CDT - 12:44:48 PM CDT	1h 17m	DRIVING(ELD)		587	308,865 mi	40.8 mi NW Cortez, CO
12:44:48 PM CDT - 2:10:39 PM CDT	1h 25m	DRIVING(ELD)		587	308,935 mi	15.2 mi NNW Shiprock, NM
2:10:39 PM CDT - 2:45:15 PM CDT	34m 36s	ON DUTY		587	309,020 mi	22.3 mi N Gallup, NM
2:45:15 PM CDT - 4:38:42 PM CDT	1h 53m	DRIVING(ELD)		587	309,020 mi	22.3 mi N Gallup, NM

Time	Duration	Status	Remark	Vehicle	Odometer	Location
4:38:42 PM CDT - 4:43:25 PM CDT	4m 43s	OFF DUTY		587	309,132 mi	23.4 mi ESE Grants, NM
4:43:25 PM CDT - 4:47:23 PM CDT	3m 57s	DRIVING(ELD)		587	309,132 mi	23.4 mi ESE Grants, NM
4:47:23 PM CDT - 5:01:17 PM CDT	13m 54s	OFF DUTY		587	309,132 mi	24.1 mi ESE Grants, NM
5:01:17 PM CDT - 5:04:01 PM CDT	2m 43s	DRIVING(ELD)		587	309,132 mi	24.2 mi ESE Grants, NM
5:04:01 PM CDT - 5:08:41 PM CDT	4m 40s	OFF DUTY		587	309,133 mi	24.9 mi ESE Grants, NM
5:08:41 PM CDT - 5:17:00 PM CDT	8m 18s	DRIVING(ELD)		587	309,133 mi	25.0 mi ESE Grants, NM
5:17:00 PM CDT - 5:22:58 PM CDT	5m 58s	OFF DUTY		587	309,134 mi	26.0 mi ESE Grants, NM
5:22:58 PM CDT - 5:25:24 PM CDT	2m 25s	DRIVING(ELD)		587	309,134 mi	26.1 mi ESE Grants, NM
5:25:24 PM CDT - 5:30:39 PM CDT	5m 15s	OFF DUTY		587	309,135 mi	26.7 mi ESE Grants, NM
5:30:39 PM CDT - 5:42:34 PM CDT	11m 54s	DRIVING(ELD)		587	309,135 mi	26.8 mi ESE Grants, NM
5:42:34 PM CDT - 5:42:53 PM CDT	18s	ON DUTY		587	309,137 mi	28.3 mi ESE Grants, NM
5:42:53 PM CDT - 5:45:02 PM CDT	2m 8s	DRIVING(ELD)		587	309,137 mi	28.3 mi ESE Grants, NM
5:45:02 PM CDT - 5:49:58 PM CDT	4m 56s	OFF DUTY		587	309,137 mi	28.3 mi ESE Grants, NM
5:49:58 PM CDT - 5:53:21 PM CDT	3m 22s	DRIVING(ELD)		587	309,137 mi	28.4 mi ESE Grants, NM
5:53:21 PM CDT - 6:00:28 PM CDT	7m 7s	OFF DUTY		587	309,138 mi	29.3 mi ESE Grants, NM
6:00:28 PM CDT - 6:16:46 PM CDT	16m 17s	DRIVING(ELD)		587	309,138 mi	29.4 mi ESE Grants, NM
6:16:46 PM CDT - 6:21:20 PM CDT	4m 34s	OFF DUTY		587	309,140 mi	30.8 mi ESE Grants, NM
6:21:20 PM CDT - 7:07:04 PM CDT	45m 43s	DRIVING(ELD)		587	309,140 mi	30.8 mi ESE Grants, NM
7:07:04 PM CDT - 12:00:00 AM CDT	4h 52m	OFF DUTY		587	309,164 mi	15.5 mi W South Valley, NM

Tue, Apr 1	10:57:09	9:41:31	0.5 mi E Ontario, OR	43.5 mi NW Moab, UT

Carrier Name: Xross Integrated Transport
Carrier Address: 218 E Bedford St, Dimmitt TX 79027
Carrier US DOT Number: 2195271

ELD Provider & ID: Samsara (82K7)

Driver: Richard Ivan Woods (RichardI)
App: Signed into v.2530.200.15543
Driver License: TX 13779825
Ruleset: USA Property (8/70)
Vehicles: 587 (R583864)
Home Terminal Name: Xross Integrated Transport
Home Terminal Address: 218 E Bedford St, Dimmitt TX 79027

Shipping ID: 00101726 wood
Trailer Name: LB26
Distance: 579 mi

Richard Ivan Woods — Tue, Apr 1

Certified on 04/02/2025 at 7:42 AM

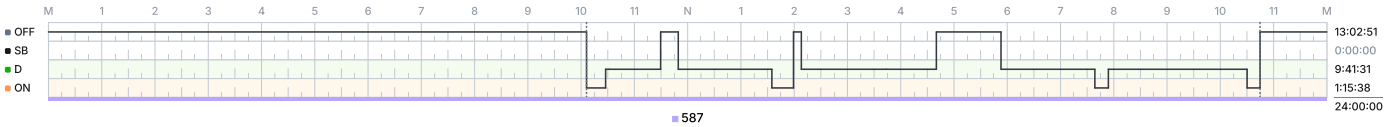

Time	Duration	Status	Remark	Vehicle	Odometer	Location
12:00:00 AM CDT - 10:06:06 AM CDT	10h 6m	OFF DUTY		587	308,159 mi	0.5 mi E Ontario, OR
10:06:06 AM CDT - 10:27:35 AM CDT	21m 29s	ON DUTY		587	308,159 mi	0.5 mi E Ontario, OR
10:27:35 AM CDT - 10:31:54 AM CDT	4m 18s	DRIVING(ELD)		587	308,159 mi	0.5 mi E Ontario, OR
10:31:54 AM CDT - 11:29:34 AM CDT	57m 39s	DRIVING(ELD)		587	308,160 mi	1.8 mi SE Ontario, OR
11:29:34 AM CDT - 11:49:26 AM CDT	19m 52s	OFF DUTY		587	308,224 mi	10.6 mi SSE Boise, ID
11:49:26 AM CDT - 1:34:52 PM CDT	1h 45m	DRIVING(ELD)		587	308,224 mi	10.6 mi SSE Boise, ID
1:34:52 PM CDT - 1:59:13 PM CDT	24m 21s	ON DUTY	Fuel	587	308,336 mi	6.1 mi N Twin Falls, ID
1:59:13 PM CDT - 2:08:03 PM CDT	8m 50s	OFF DUTY		587	308,336 mi	6.0 mi N Twin Falls, ID
2:08:03 PM CDT - 3:43:41 PM CDT	1h 35m	DRIVING(ELD)		587	308,336 mi	6.0 mi N Twin Falls, ID

Time	Duration	Status	Remark	Vehicle	Odometer	Location
3:43:41 PM CDT - 4:40:09 PM CDT	56m 27s	DRIVING(ELD)		587	308,441 mi	39.6 mi WNW Tremonton, UT
4:40:09 PM CDT - 5:52:58 PM CDT	1h 12m	OFF DUTY		587	308,500 mi	2.1 mi W Brigham City, UT
5:52:58 PM CDT - 7:38:42 PM CDT	1h 45m	DRIVING(ELD)		587	308,500 mi	2.1 mi W Brigham City, UT
7:38:42 PM CDT - 7:53:54 PM CDT	15m 12s	ON DUTY		587	308,604 mi	2.2 mi NW Springville, UT
7:53:54 PM CDT - 10:30:10 PM CDT	2h 36m	DRIVING(ELD)		587	308,604 mi	2.2 mi NW Springville, UT
10:30:10 PM CDT - 10:44:46 PM CDT	14m 36s	ON DUTY		587	308,742 mi	43.5 mi NW Moab, UT
10:44:46 PM CDT - 12:00:00 AM CDT	1h 15m	OFF DUTY		587	308,742 mi	43.5 mi NW Moab, UT

0